VATSIM MIAMI ARTCC

FACILITY ENGINEERING

ZMA FE DIRECTIVE 3D CHG 2

Effective: 11/15/2022

SUBJ: Miami ATCT & TRACON SOP

This order prescribes local air traffic control procedures and phraseology for use by Miami Air Traffic Control Tower personnel on the VATSIM Network. This is not intended for real-world use. Miami International Airport (MIA) is designated as a "major" airport and thus requires additional certifications. While this document is lengthy, most of the length comes from figures in the appendices. Welcome to the big leagues!

Note that any **bolded routing** requires the aircraft to be RNAV/RNP equipped and capable.

Erik Quinn
Facility Engineer
VATSIM Miami ARTCC

Dan Leavitt
Air Traffic Manager
VATSIM Miami ARTCC

1. PURPOSE

This order applies to VATSIM Air Traffic Control Specialists who seek to control air traffic at the Miami Air Traffic Control Tower or TRACON. All concerned personnel shall familiarize themselves with the provisions of this order which pertain to their operational responsibilities.

2. CANCELLATION

This document replaces and cancels ZMA Directive 3, Version C, dated as effective on 11/15/2021.

TABLE OF CONTENTS

1. PURPOSE 2
2. CANCELLATION 2
3. CLEARANCE DELIVERY 3
3.1 FREQUENCIES 3
3.2 GENERAL RESPONSIBILITIES 3
3.3 MID SHIFT OPERATIONS (2300L - 0600L) 3
3.4 PREFERRED ROUTINGS & ALTITUDE CONSTRAINTS 3
3.5 GATES WITHOUT NON-MOVEMENT PUSHBACK AREAS 6
4. GROUND CONTROL (GC) 7
4.1 FREQUENCIES 7
4.2 GENERAL RESPONSIBILITIES 7
4.3 RUNWAY CROSSING COORDINATION 7
4.4 PREFERRED TAXIWAY UTILIZATION 8
4.5 MOVEMENT AREA TAXI RESTRICTIONS 8
4.6 RAMP CONTROL PROCEDURES 8
5. LOCAL CONTROL (LC) 9
5.1 FREQUENCIES 9
5.2 GENERAL RESPONSIBILITIES 9
5.3 DEPARTURE HANDLING 9
5.4 VFR HANDLING 10
5.5 LAND AND HOLD SHORT OPERATIONS (LAHSO) 10
5.6 RUNWAY USAGE 10
5.7 ARRIVAL DEPARTURE WINDOWS (ADWS) 11
5.8 RADAR TOWER FUNCTIONS 11
6. APPROACH & DEPARTURE CONTROL 17
6.1 GENERAL INFORMATION 17
6.2 NORTH FINAL (V) - MIA_V_APP - 124.850 (PRIMARY) 19
6.3 SOUTH FINAL (A) - MIA_A_APP - 133.05 19
6.4 NORTH FEEDER (N) - MIA_N_APP - 125.75 19
6.5 SOUTH FEEDER (S) - MIA_S_APP - 120.5 19
6.6 NORTH SATELLITE (Q) - MIA_Q_APP - 126.850 19
6.7 SOUTH SATELLITE(H) - MIA_H_APP - 125.25 19
6.8 NORTH DEPARTURE (D) - MIA_D_DEP - 119.450 20
6.9 SOUTH DEPARTURE (W) – MIA_W_DEP – 125.5 20
6.10 LAUDERDALE NORTH DEPARTURE (L) - MIA_L_DEP - 126.050 20
6.11 FISEL (R) - MIA_R_APP - 133.770 20
6.12 JINGL (J) - MIA_J_APP - 118.100 20
6.13 LAUDERDALE FINAL (F) - MIA_F_APP - 133.720 20

For VATSIM simulation purposes only. No affiliation with FAA.

3. Clearance Delivery

3.1 Frequencies

3.1.1 Clearance Delivery (CD) – MIA_DEL – 135.35

3.2 General Responsibilities

3.2.1 CD controllers shall be familiar with SIDs and their groups. Further information can be found in Table 1 and Figure 1 on page 4.

3.2.2 When multiple departure sectors are open, assign departure frequencies as follows:

3.2.2.1 Aircraft routed over N/E SIDs go to D (North Departure) on 119.45

3.2.2.2 Aircraft routed over S SIDs go to W (South Departure) on 125.5

3.2.2.3 Note that MIA_L_DEP does not affect MIA departures. L handles only FLL traffic.

3.2.3 Clear VFR departures out of "Miami Bravo Airspace", and instruct them to "maintain VFR at or below 2,500". Create a VFR flight plan including aircraft type/suffix, origin airport KMIA, direction of flight, and intended VFR cruise altitude.

3.2.4 Assign IFR departures 5,000 feet or the requested final altitude, whichever is lower.

3.2.4.1 If the requested altitude is lower, inform the controller above you.

3.3 Mid Shift Operations (2300L - 0600L)

3.3.1 Runways 8L-26R and 12-30 are closed.

3.3.2 Ensure aircraft requesting GWAVA or MAYNR SIDs are reassigned the NNOCE SID (for noise abatement).

3.4 Preferred Routings & Altitude Constraints

3.4.1 Clear IFR departures via a current[1] RNAV SID. Clear aircraft who are unable RNAV SIDs via the MIA# departure, with the appropriate charted transition. See Table 1 on page 4 for a full list.

3.4.1.1 Exception: The NNOCE SID shall not be used, except in accordance with Section 3.3.

3.4.2 For destinations listed in Table 3, controllers shall ensure all aircraft are assigned the specified routes and altitudes (unless otherwise coordinated with the affected controllers).

3.4.3 Assign all BNGOS/HURCN departures EVEN cruise altitudes.

3.4.4 Assign all FLMGO/ALTNN departures ODD cruise altitudes.

[1] For aircraft filing old SID versions, remove the SID and issue MIA# departure, with the appropriate charted transition.

For VATSIM simulation purposes only. No affiliation with FAA.

RNAV SID	GROUP	NON-RNAV
BNGOS#	N	MIA# BNGOS
HURCN#	N	MIA# HURCN
FLMGO#	N	MIA# FLMGO
LIFRR#	N	MIA# DORRL
DORRL#	N	
ALTNN#	N	MIA# ALTNN
FOLZZ#	E	MIA# FOLZZ
---	E	MIA# ZFP
HUSIL#	S	MIA# KETLL
KLADA#	S	
GWAVA#	S	MIA# GWAVA
MAYNR#	S	MIA# MAYNR
GLADZ#	S	---[2]
NNOCE#	S	(VARIES)

Table 1 – MIA SIDs & Groups

RNAV SID	GROUP	NON-RNAV
BNICE#	N	FLL# BNICE
HROCK#	N	FLL# HROCK
FRSBE#	N	FLL# FRSBE
LIFRR#	N	FLL# DORRL
DORRL#	N	
AGERS#	N	FLL# AARPS
FEALX#	E	FLL# FEALX
---	E	FLL# ZFP
SNAPR#	S	FLL# BEECH
REGAE#	S	
MAYNR#	S	FLL# MAYNR
GLADZ#	S	---[3]

Table 2 – FLL SIDs & Groups

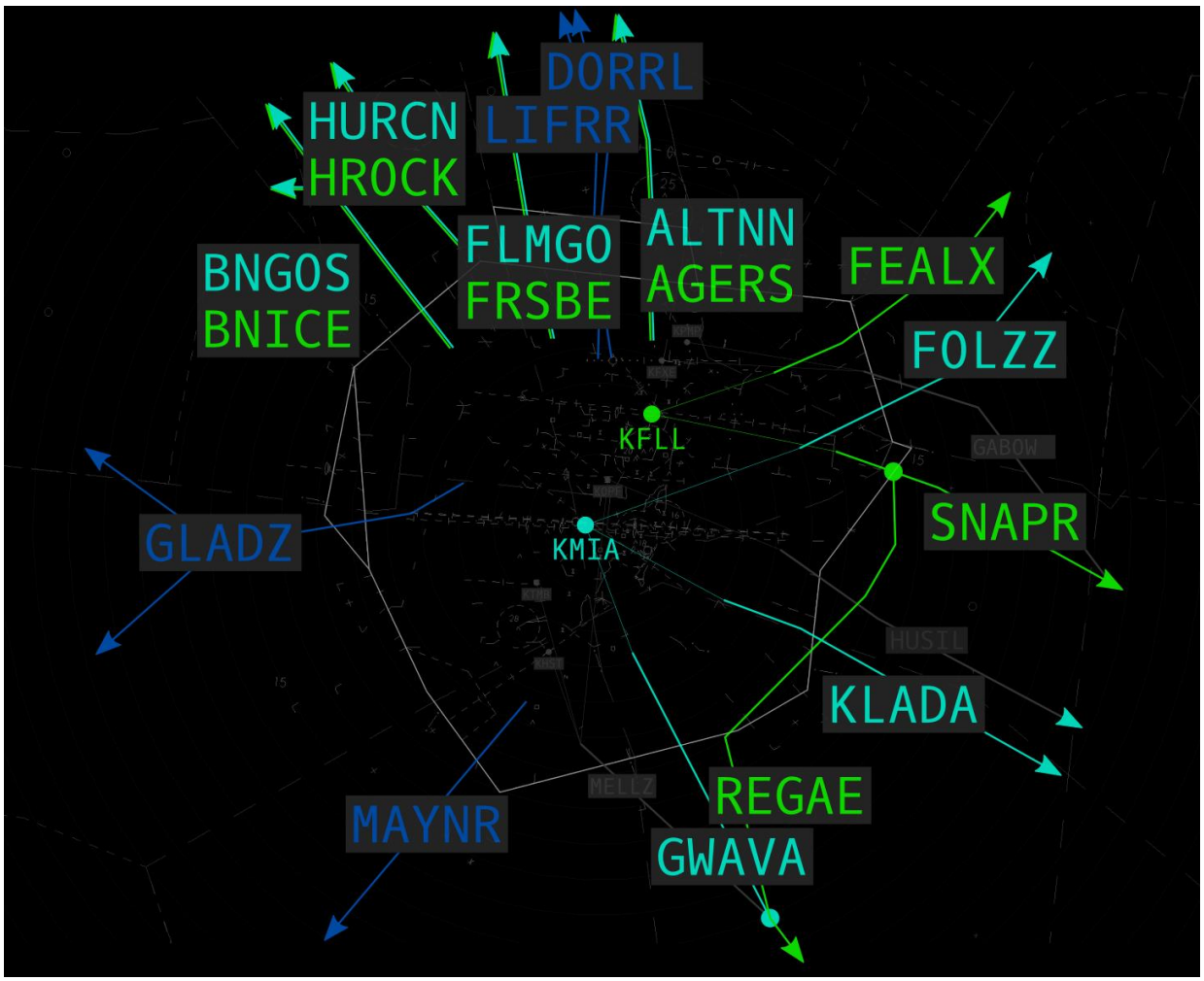

Figure 1 – MIA & FLL SID Structure

[2] Aircraft must be on the **GLADZ#** SID in order to depart in that direction. If unable, find appropriate different routing.
[3] Aircraft must be on the **GLADZ#** SID in order to depart in that direction. If unable, find appropriate different routing.

For VATSIM simulation purposes only. No affiliation with FAA.

DESTINATION	ROUTING REQUIREMENTS	ALTITUDES
TPA TRACON	**BNGOS# COREA BLFRG#** MIA# BNGOS LBV BRDGE# KSRQ: **BNGOS# COREA** LBV ROGAN DCT MIA# BNGOS LBV ROGAN DCT	AOB FL240
MCO TRACON	**FLMGO# WAPOM RIDES#** MIA# FLMGO PHK GOOFY# KMLB & Cape Canaveral Area: **LIFRR# WIXED** VALKA MLB DCT MIA# DORRL CLEFF T208 VALKA MLB DCT	AOB FL230
DAB TRACON	**LIFRR# WIXED** VALKA T208 SMYRA DCT MIA# DORRL CLEFF T208 SMYRA	AOB FL290
PBI TRACON	ATONE PBI[4] DCT KVRB/KFPR: ATONE SMUGS DCT	AOB 10,000
RSW TRACON	**BNGOS# MERKS** RSW DCT MIA# BNGOS RSW[5] DCT	AOB 14,000
EYW TRACON	**MAYNR# MAYNR** GUCEL DCT MIA# MAYNR GUCEL DCT	AOB FL200
KJAX	**FLMGO# STYMY** ORL **HAINY QUBEN#** MIA# FLMGO STYMY ORL POGIE#	AOB FL310
KATL	**FLMGO# STYMY** Q77 SHRKS LAIRI LARZZ (ANY STAR) MIA# HURCN JAYMC SMELZ Q116 JAWJA SZW LGC#	---
MYNN & SATS	**KLADA# RAJAY** ZQA[6] DCT MIA# KETLL RAJAY ZQA DCT	AOB FL230
MYGF	**FOLZZ# PADUS** DCT MIA# FOLZZ PADUS DCT	AOB 15,000
MYAM/MYAT	**FOLZZ# ZFP** DCT MIA# FOLZZ ZFP DCT	AOB FL230
KMTH	**MAYNR# MAYNR** DCT MIA# MAYNR DCT	AOB 14,000
MUHA	MUHA LANDING EAST: **GLADZ# LULLS** Y196 **CANOA ENTRY#** **MAYNR# CANOA ENTRY#** MIA# MAYNR CANOA [**ENTRY#** / AVERA#] MUHA LANDING WEST: **GLADZ# LULLS MAXIM EPMAR#** **MAYNR# MAXIM EPMAR#** MIA# MAYNR MAXIM DCT	---

Table 3 – PDARs & Altitude Constraints

[4] When destination is specifically KPBI, then "PBI" may be omitted from the route (collocated with the airport).
[5] When destination is specifically KRSW, then "RSW" may be omitted from the route (collocated with the airport).
[6] When destination is specifically MYNN, then "ZQA" may be omitted from the route (collocated with the airport).

For VATSIM simulation purposes only. No affiliation with FAA.

3.5 Gates Without Non-Movement Pushback Areas

The following gates do not have the ability to push back completely within non-movement areas, and require a ground control clearance to push back onto an active taxiway. For these gates, instruct aircraft to contact RC/GC "when ready to push" immediately upon correct readback of their clearance. Aircraft parked on any other gate may be advised to push and start at pilot's discretion, unless otherwise requested by RC or GC.

3.5.1 Gates D2-D14, even (onto Taxiway N)

3.5.2 Gate E23 (onto Taxiway P)

3.5.3 Gate D60: X, W, V, K, M, P (onto Taxiway N)

3.5.4 Gate F16, F18 and higher (onto Taxiway P)

3.5.5 Gate G14, G16, G19 (onto Taxiway P)

3.5.6 All Cargo City gates (onto Taxiway R)

3.5.7 Western U Gates W60 and W61 (onto Taxiway S)

3.5.8 Eastern U Gates W59 (onto Taxiway S)

3.5.9 All Fedex Cargo gates (onto Taxiway K) - does not include UPS ramp

For VATSIM simulation purposes only. No affiliation with FAA.

4. GROUND CONTROL (GC)

4.1 FREQUENCIES

4.1.1 Ground Control North (GCN) - MIA_N_GND - 121.8 (Primary: MIA_GND)

4.1.2 Ground Control South (GCS) - MIA_S_GND - 127.5

4.1.3 Ground Control West (GCW) - MIA_W_GND - 120.35

4.1.4 Ramp Control North (RCN, "Miami Gates") - MIA_RN_GND - 130.95 (Primary: MIA_R_GND)

4.1.5 Ramp Control South (RCS, "Miami Gates") - MIA_RS_GND - 130.5

4.1.6 Ground Metering / Gate Hold (GH) - MIA_GH_GND - 133.72 (shared with "F")

4.2 GENERAL RESPONSIBILITIES

4.2.1 Ensure positive separation of taxiing traffic.

4.2.2 To the extent practical, prevent any undue delay to taxiing traffic.

4.2.3 To the extent practical, sequence departing aircraft by departure gate.

4.2.4 Ensure runway exits are kept clear and arriving aircraft are moved as soon as possible to ensure all exits are available to subsequent arrivals.

4.2.5 Ensure timely transfer of communications to the subsequent GC or LC frequency such that aircraft may continue their taxi without any undue delay.

4.2.6 When operating as Miami Ground, do not provide ramp control services within nonmovement areas, except in a purely advisory nature. Ramp control instructions should only be given when logged on specifically as either RCN or RCS.

4.2.7 For GC areas of responsibility, see Figure 2 through Figure 7, beginning on page 12.

4.2.8 Do not specify "M1" in taxi instructions to Runway 8R.

4.2.9 For aircraft seeking pushback from gates listed in Section 3.5, issue the pushback clearance and a direction to face (or a direction for the tail). Keep in mind that all regional jets will push straight back.

"ENY4286, PUSHBACK ONTO N APPROVED, STRAIGHT BACK"
"BHS230, PUSHBACK ONTO P APPROVED, [FACE NORTHWEST / TAIL SOUTHEAST]"

4.3 RUNWAY CROSSING COORDINATION

4.3.1 When requesting a runway crossing from LC, specify the runway and the point at which crossing will occur, using the format of "Cross [rwy] at [intersection]?". LC's approval indicates approval for only one aircraft to cross as specified, unless "...with 2" is stated by GC and read back by LC in the original crossing request.

4.3.2 In the coordination, use the Lima taxiway identifier (eg. L3, L6, L10, etc) to reference the crossing points, not K or M (eg. K3, M6, K10).

4.3.3 When both Runway 8L-26R and Runway 8R-26L are open, multiple runway crossings are authorized. GC shall specify "Cross 8L AND 8R at [L1/L7/etc]" when requesting a multiple-runway crossing.

4.3.4 When the traffic is clear of the runway, advise LC "Runway [rwy], crossing complete".

4.3.5 By approving GC's request to cross Runway 12, LC is also thereby granting approval for GC to use LC-owned taxiways to get to GC-owned taxiways (via the shortest taxi route).

4.3.6 LC may grant GC "crossing blankets" for individual runways, which means GC may cross those runways without coordination with LC. If GC has been granted crossing blankets, and has an aircraft who will enter and cross a runway when landing traffic is within a 2nm final for that runway, GC shall announce to LC that they are "crossing [rwy]" about 15 seconds prior to the aircraft entering the runway. GC need not obtain acknowledgement by LC.

For VATSIM simulation purposes only. No affiliation with FAA.

4.4 Preferred Taxiway Utilization

4.4.1 M/N: Taxiway M is preferred for outbound traffic, and Taxiway N is preferred for inbound traffic. When Runway 8R-26L is the primary arrival runway, this is reversed.

4.4.2 P/Q: Taxiway Q is preferred for inbound traffic, and Taxiway P is preferred for outbound traffic.

4.4.3 Y/V/U: Taxiway Y is preferred for southbound traffic, and Taxiways V and U are preferred for northbound traffic.

4.5 Movement Area Taxi Restrictions

4.5.1 Taxiway AA has been demolished and shall not be utilized.

4.5.2 Taxiway P, east of Taxiway U, is prohibited to aircraft larger than ADG4 (757/767).

4.5.3 ADG6 aircraft (such as the A380 or B747-8) are only permitted to utilize Runways 8R and 9, and Taxiways M, Q, S, Y, U, Z, and N13/M11/L11.

4.5.4 The GAC Apron is prohibited to aircraft larger than ADG2 (GLF4/C750/CRJ7/E145/F2TH/H25C).

4.6 Ramp Control Procedures

4.6.1 Unless otherwise specifically approved by the ATM or Event CIC, do not open RCN or RCS unless both CD and GC services are already being provided, and the ground controller(s) deems it appropriate.

4.6.2 RCN is responsible for Spot 2 through Spot 16, and the associated taxilanes and gates. RCS has Spot 17 through Spot 27, and the associated taxilanes and gates. Note that gates which push directly onto a taxiway (indicated in red on the ASDE) will be worked entirely by GC, and not by the ramp. For a full list of these gate numbers, see Section 3.5.

4.6.3 Spot 2 and 4 may be utilized simultaneously only if both aircraft have a maximum wingspan of 125 feet (B757 or smaller).

4.6.3.1 Spot 3 supports up to ADG5 (all widebodies and B744), but blocks Spots 2 and 4.

4.6.4 The ramp taxilane south of Taxiway N, between Gates D30 and D50, is prohibited to aircraft larger than ADG4 (757/767).

4.6.5 Spot 11 and 12 at Gate D60 are prohibited for aircraft larger than ADG3 (737 & A320 family).

4.6.6 Spot 13 and 15 may be utilized simultaneously only if both aircraft have a maximum wingspan of 125 feet (B757 or smaller).

4.6.6.1 Spot 14 supports up to ADG5 (all widebodies and B744), but blocks Spot 13, and restricts Spot 15 to aircraft with a max wingspan of 85 feet (E170/CRJ and smaller).

4.6.7 Spot 16 is prohibited to aircraft larger than ADG5 (all widebodies and B744).

4.6.8 Spots 17, 18, 19, 20, and 24 are prohibited to aircraft larger than ADG5 (widebodies & B744).

4.6.8.1 ADG6 are permitted near spot 17/18 by following the "ADG6" taxi line, which blocks Spots 17 and 18.

4.6.9 Spots 21 and 23 may be utilized simultaneously only if both aircraft have a maximum wingspan of 125 feet (B757 or smaller).

4.6.9.1 Spot 22 supports ADG5 (all widebodies and B744), but blocks Spots 21 and 23.

4.6.10 Spots 24 and 26 support up to ADG5 (all widebodies and B744), and the Boeing 747-8.

4.6.11 Spot 25 supports up to ADG5 (all widebodies and B744), BUT NOT the Boeing 747-8.

4.6.11.1 Spot 26 may be utilized simultaneously with Spot 25 when one aircraft has a max wingspan of 85 feet (E170/CRJ), and the other has a max wingspan of 125 feet (757).

4.6.12 Spot 27 supports up to ADG4 (757/767).

4.6.12.1 Spot 26 may be utilized simultaneously with Spot 27 when one aircraft has a maximum wingspan of 85 feet (E170/CRJ) and the other is ADG4 (757/767) or smaller.

For VATSIM simulation purposes only. No affiliation with FAA.

5. LOCAL CONTROL (LC)

5.1 FREQUENCIES

5.1.1 Local Control North (LCN) - MIA_N_TWR - 118.300 (Primary: MIA_TWR)

5.1.2 Local Control South (LCS) - MIA_S_TWR - 123.900

5.2 GENERAL RESPONSIBILITIES

5.2.1 Ensure positive separation of aircraft within LC assigned airspace and movement areas.

5.2.2 Issue RVR information as required.

5.2.3 B757, Heavy, and Super aircraft are not authorized intersection departures for any runway when the full length is usable.

5.2.4 Issue a wake turbulence advisory to arrivals within a 3 mile final for Runway 12 when a turbojet aircraft departs Runway 8R. When the arrival is within 1 mile of the threshold, LC shall not allow a turbojet aircraft to begin departure roll until the arrival crosses the Runway 8R extended centerline. This procedure additionally applies to aircraft arriving Runway 8R with turbojet aircraft departures on Runway 12.

5.2.5 In the event of a missed approach or balked landing, LCN and LCS shall coordinate headings and altitudes that will ensure separation from all other known/observed traffic.

5.2.6 For LC areas of responsibility, see Figure 6 through Figure 8, beginning on page 14.

5.3 DEPARTURE HANDLING

5.3.1 With all takeoff clearances on RNAV SIDs, state the first fix the aircraft should be navigating to.

"AAL123, MIAMI TOWER, WIND 1-1-0 at 1-5, RNAV BALLR, RUNWAY 8R, CLEARED FOR TAKEOFF"

5.3.2 Unless otherwise coordinated, LC may utilize departure headings in accordance with Table 4 and Table 5.

5.3.2.1 When LCN and LCS are combined, all headings between the extremes of each range may be utilized by the combined LC controller.

5.3.2.2 If departure headings are to be utilized with aircraft on RNAV SIDs, ensure departure control is generally aware that some aircraft on RNAV SIDs may have tower-assigned departure headings.

EAST OPERATIONS		
POSITION	HEADING	BLOCKS
LCN	090	CSALT
	105	CSALT, JAMBA
LCS	120	JAMBA
LCN+LCS	090-120	N/A

Table 4 – Departure Headings (East Ops)

WEST OPERATIONS		
POSITION	HEADING	BLOCKS
LCN	320	---
	305	WADLE
	290	KROCS, WADLE
LCS	265	KSENO
	250	---
LCN+LCS	250-320	N/A

Table 5 – Departure Headings (West Ops)

5.3.3 Departure releases are automatic, with the sole exceptions being the following:

5.3.3.1 LCN shall APREQ all departures to south fixes with LCS.

5.3.3.2 LCS shall APREQ all departures (except RNAV BALLR) with LCN.

5.3.3.3 LCS shall APREQ all Runway 30 departures with D (North Departure), *and then LCN*.

5.3.4 To request a departure release, state the word "REQUEST", followed by the SID/VDF. As appropriate, use the word "PROP", "HEAVY", or "SUPER".

"REQUEST HEAVY SKIPS" [...] "RELEASED" or "RELEASED BEHIND [CALLSIGN]" or "STAND BY"

For VATSIM simulation purposes only. No affiliation with FAA.

5.4 VFR HANDLING

5.4.1 For airborne VFR overflight aircraft transitioning Miami Bravo airspace north/south, assign the Red Road Transition at 3,500, and transfer communications with the aircraft to the appropriate approach control frequency[7]. When opposite direction traffic or cloud ceilings dictate, 3,000 may be used as an alternative.

5.4.2 For VFR aircraft departing KMIA destined for FLL/FXE/PMP/BCT, assign:

5.4.2.1 East Ops: Red Road Transition at 2,500.
Transfer communications to OPF TWR prior to the Hialeah Race Track.

5.4.2.2 West Ops: heading 070 to join shoreline northbound at 1,400.[8]
Transfer communications to FLL TWR prior to Haulover Inlet[9].

5.5 LAND AND HOLD SHORT OPERATIONS (LAHSO)

LAHSO available landing distances are contained in Figure 9 and Figure 10 on page 16.

5.5.1 LAHSO is authorized between arrivals on Runway 9 and Runway 12 only in VMC when the LAHSO runway is dry, and has a tailwind component of less than 3 knots.

5.5.2 Do not issue LAHSO clearances to any foreign air carriers.

5.6 RUNWAY USAGE

5.6.1 Unless the forecast indicates an imminent change, in wind less than 5 knots, east operations shall be conducted (landing and departing 8L/8R/12/9).

5.6.2 Preferred Runway Configurations: Daytime (0600L - 2300L), in order of preference:

5.6.2.1 East Ops: Landing 9, 12, 8L, 8R. Departing 8R, 8L, 9, 12.

5.6.2.2 West Ops: Landing 26R, 30, 26L, 27. Departing 26L, 27, 26R, 30.

5.6.3 Preferred Runway Configurations: Mid Shift (2300L - 0600L), in order of preference:

5.6.3.1 East Ops: Landing and departing 8R, 9.

5.6.3.2 West Ops: Landing 26L. Departing 26L, 27[10].

5.6.4 Converging runway operations shall only be conducted in VMC.

5.6.5 For purposes of Same Runway Separation, aircraft landing Runway 26L or Runway 30 who exit at the end into the Corral Area (8R/12 Pad) shall be considered to "occupy" the runway until are clear of the Corral area, either by entering/crossing the other runway, or crossing the Z-Bar. See Figure 5 on page 13.

5.6.6 Runway 9 intersection departures are restricted as follows:

5.6.6.1 0600 - 2300 local time: Turbojet aircraft and propeller driven aircraft with certified gross weights above 12,500 pounds may not depart from any intersection except T4.

5.6.6.2 2300 - 0600 local time: All aircraft with certified gross weights of 12,500 pounds or more and all turbojet aircraft regardless of weight will be required to utilize the full runway length. T4 intersection departures are approved for propeller driven aircraft with certified gross weight less than 12,500 pounds.

[7] When Miami Approach is offline, LC shall retain communications with the aircraft until outside the lateral confines of LC assigned airspace.
[8] This will necessitate point outs to North Final (V), North Satellite (Q), and possibly OPF TWR.
[9] Labeled as "Baker's Haulover" on Miami TAC Chart.
[10] Turbojet arrivals may be assigned Runway 27 only if the pilot advises they are unable Runway 26L.

For VATSIM simulation purposes only. No affiliation with FAA.

5.7 Arrival Departure Windows (ADWs)

5.7.1 During IMC, aircraft shall begin takeoff roll on the non-intersecting converging runway prior to:

5.7.1.1 the arrival reaching a 3nm final (arrival ground speed of 170 knots or less)

5.7.1.2 the arrival reaching a 4nm final (arrival ground speed greater than 170 knots)

5.7.2 During VMC, utilize the following ADWs and ensure the following:

5.7.2.1 Departing aircraft begin their takeoff roll before an arriving aircraft enters the ADW. If the departure has a takeoff clearance, and does not begin their takeoff roll before the arriving aircraft enters the ADW, cancel the departing aircraft's takeoff clearance.

5.7.2.2 In the event of a missed approach or balked landing, notify the other local controller immediately when converging runway operations are being utilized.

5.7.2.3 ADW Landing 30, Departing 26L - Outer: 2.7nm final, Inner: crossing Runway 27

5.7.2.4 ADW Landing 30, Departing 26R - Outer: 2.9nm final, Inner: crossing Taxiway V

5.7.2.5 ADW Landing 26L, Departing 30 - 2.4nm final, Inner: abeam Taxiway N12

5.7.2.6 ADW Landing 26R, Departing 30 - 2.7nm final, Inner: abeam western edge of L10 pavement

5.8 Radar Tower Functions

5.8.1 Only controllers holding S3 certifications may perform radar tower functions at KMIA.

5.8.2 Except as described below, Local Control may provide complete radar services, including radar identifying, tracking, initiating radar handoffs and point outs, clock/distance based traffic information, and (to a limited extent[11]) radar vectors.

5.8.2.1 Only start a track for aircraft which you have properly established positive radar identification, and called the aircraft "radar contact". If they descend below radar coverage, they will need to be re-identified. For this reason, it is not appropriate to track aircraft remaining in the traffic pattern.

5.8.2.2 Do not track IFR aircraft, except IFR overflights through LC assigned airspace.

5.8.2.3 Do not issue any approach clearances.

[11] Aircraft should only be vectored for sequencing or separation. For example, vectoring for traffic is acceptable, while vectoring for an approach, or in the traffic pattern, would not be acceptable.

For VATSIM simulation purposes only. No affiliation with FAA.

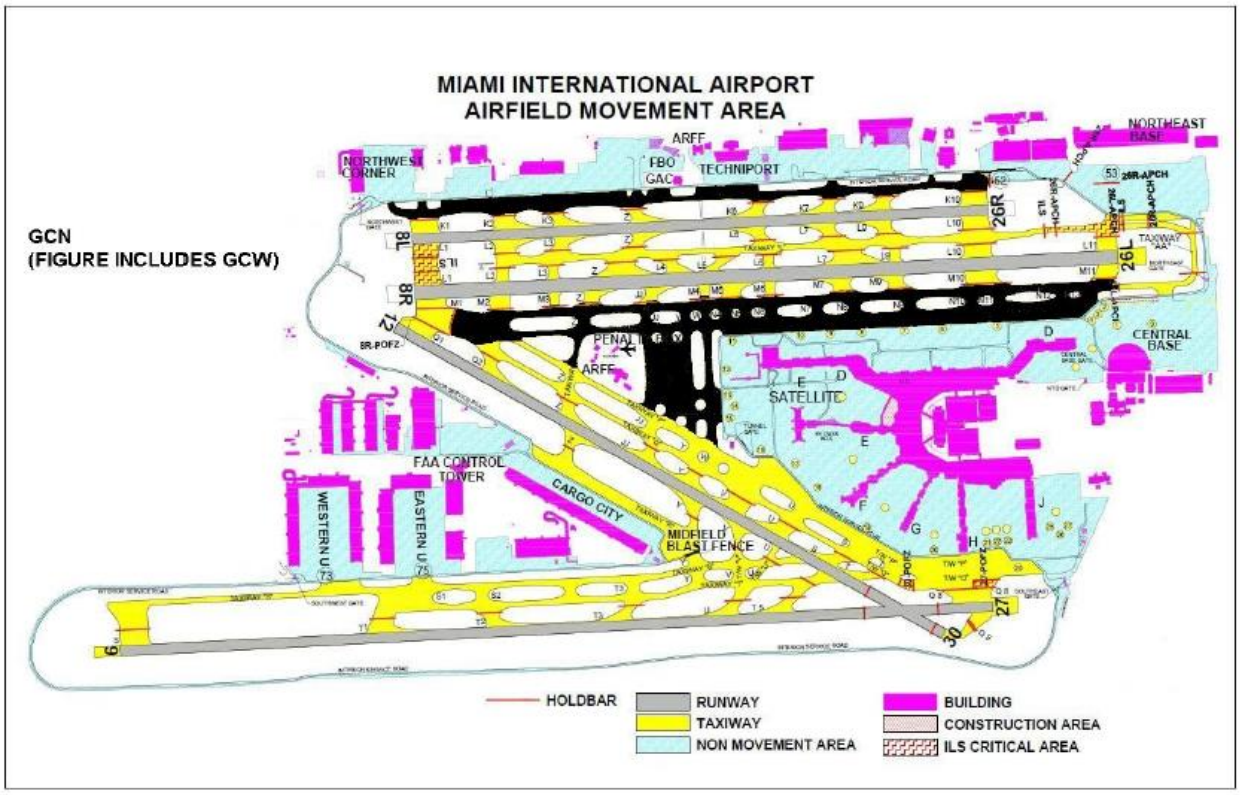

Figure 2 - Ground Control North

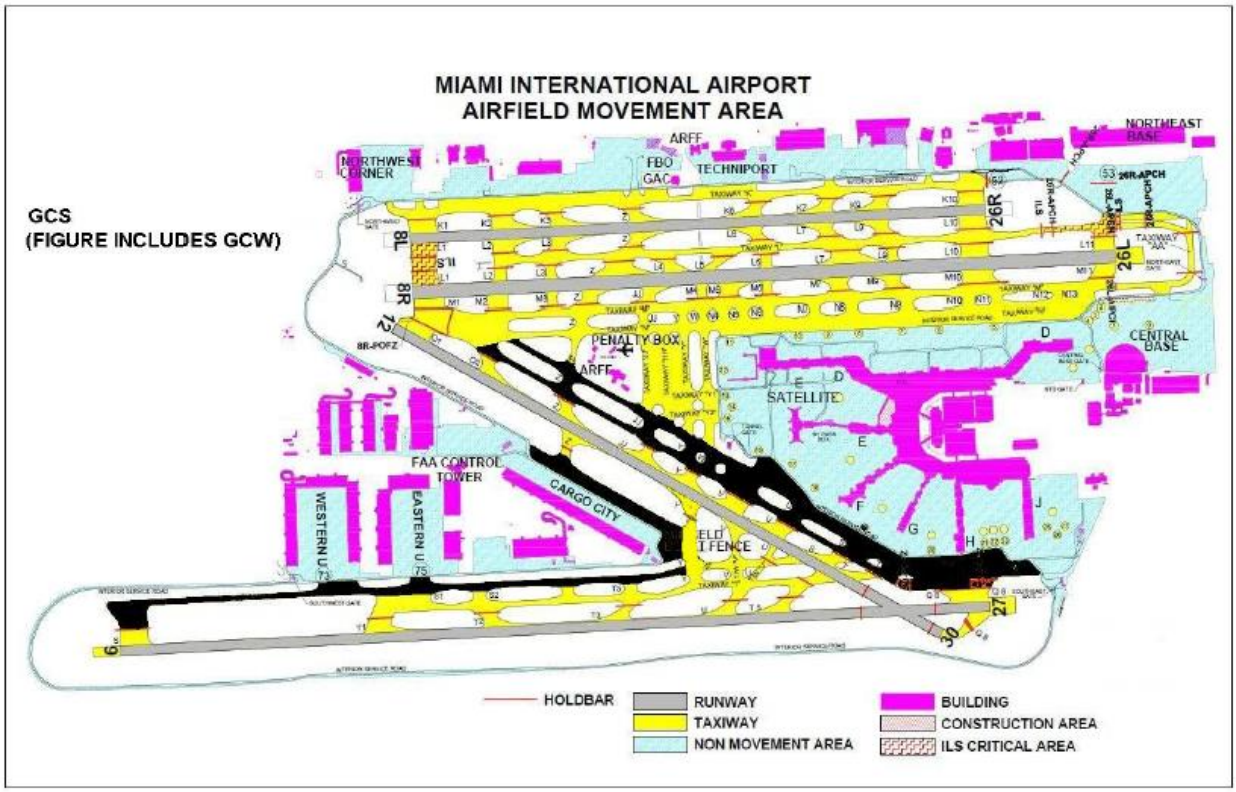

Figure 3 - Ground Control South

For VATSIM simulation purposes only. No affiliation with FAA.

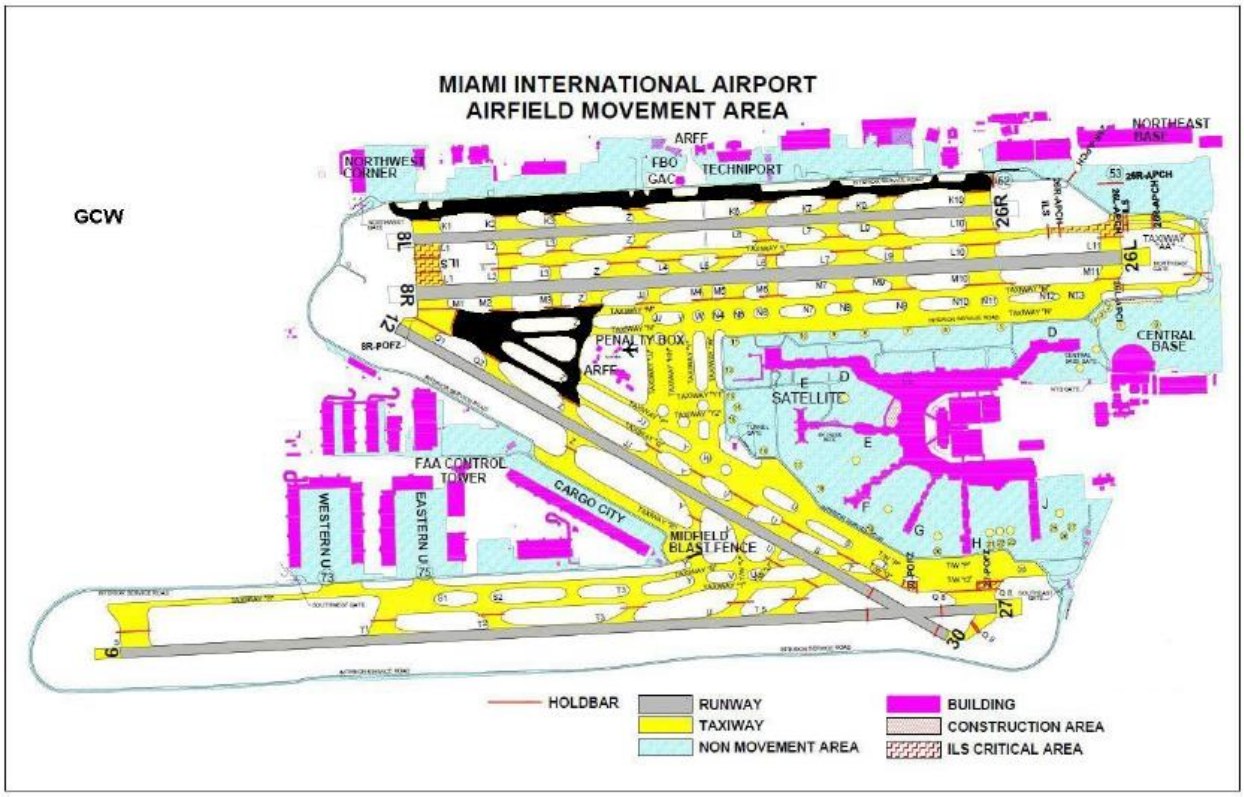

Figure 4 - Ground Control West

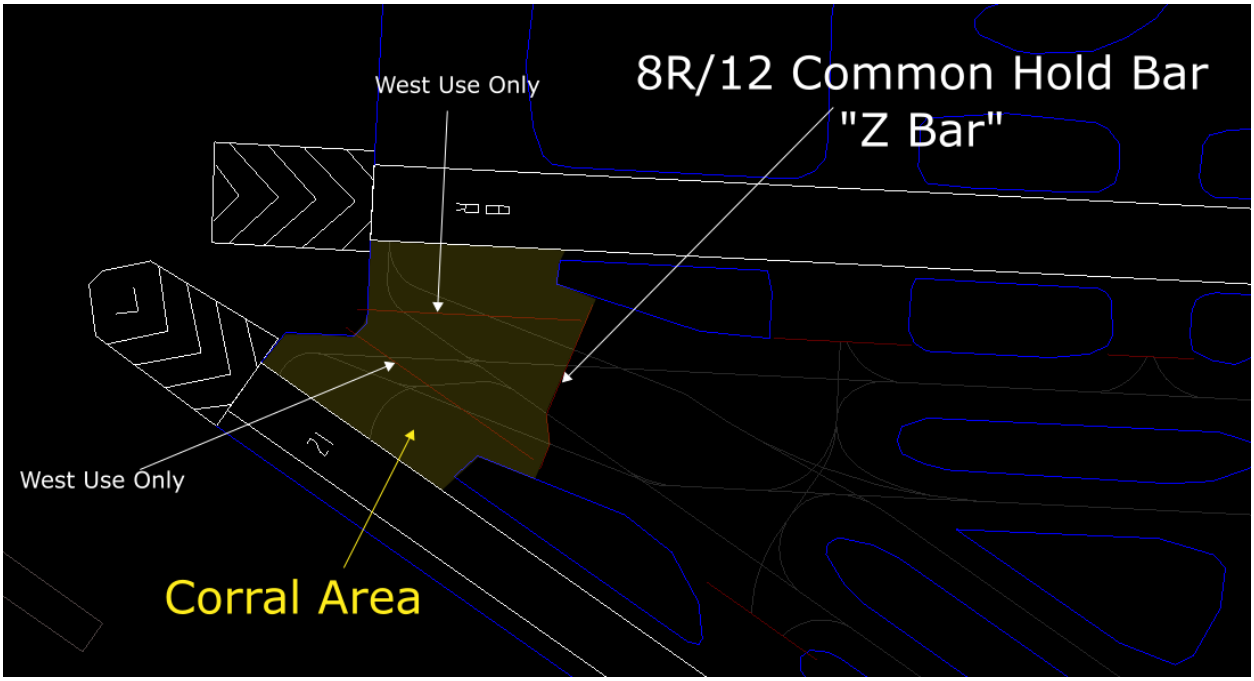

Figure 5 - Corral Area

For VATSIM simulation purposes only. No affiliation with FAA.

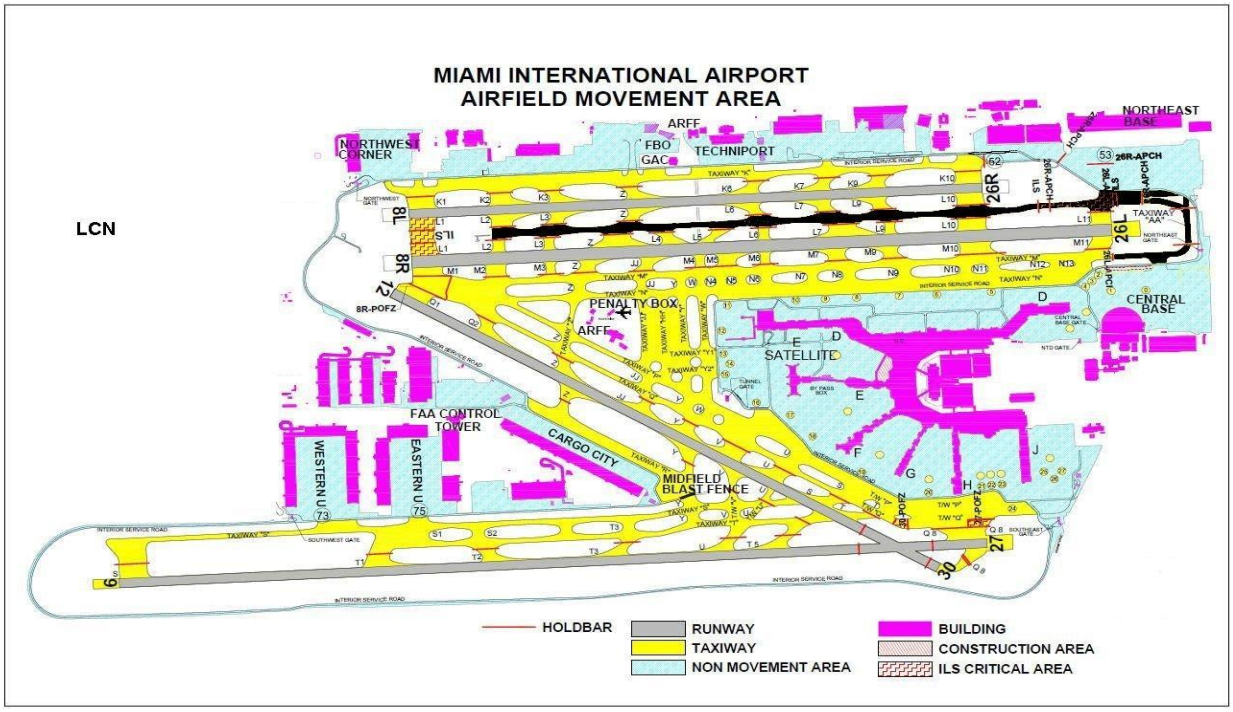

Figure 6 - Local Control North

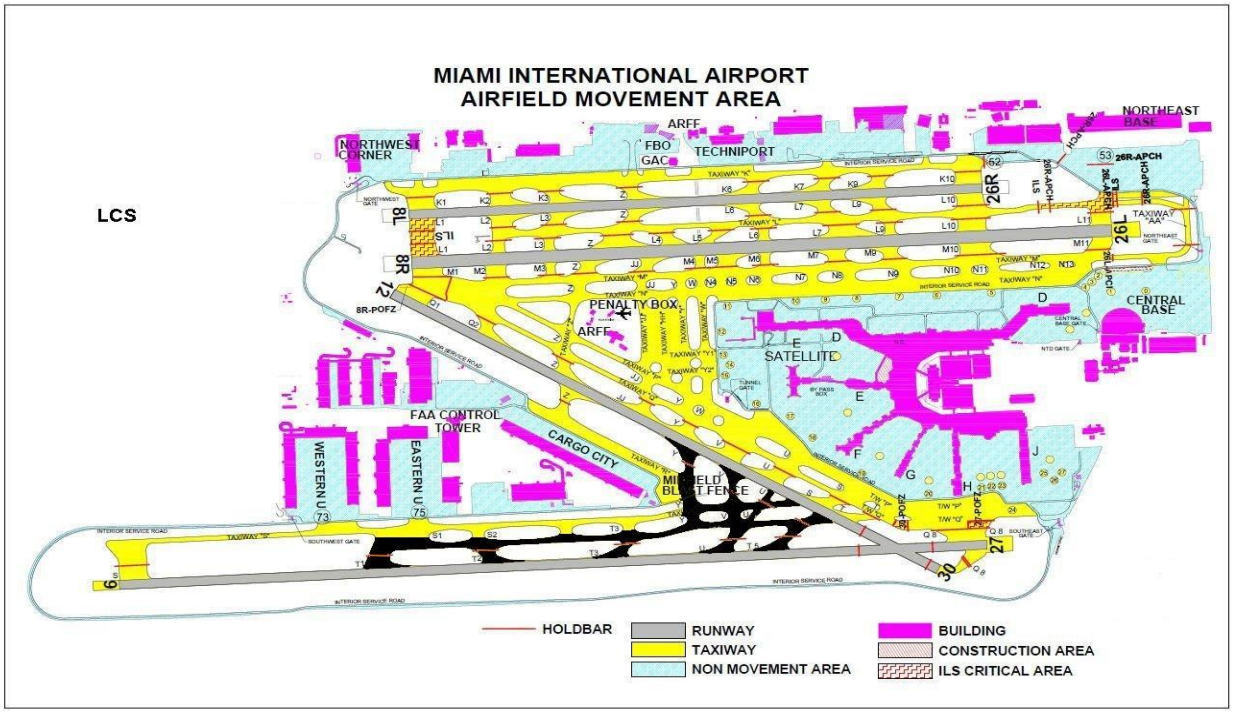

Figure 7 - Local Control South

For VATSIM simulation purposes only. No affiliation with FAA.

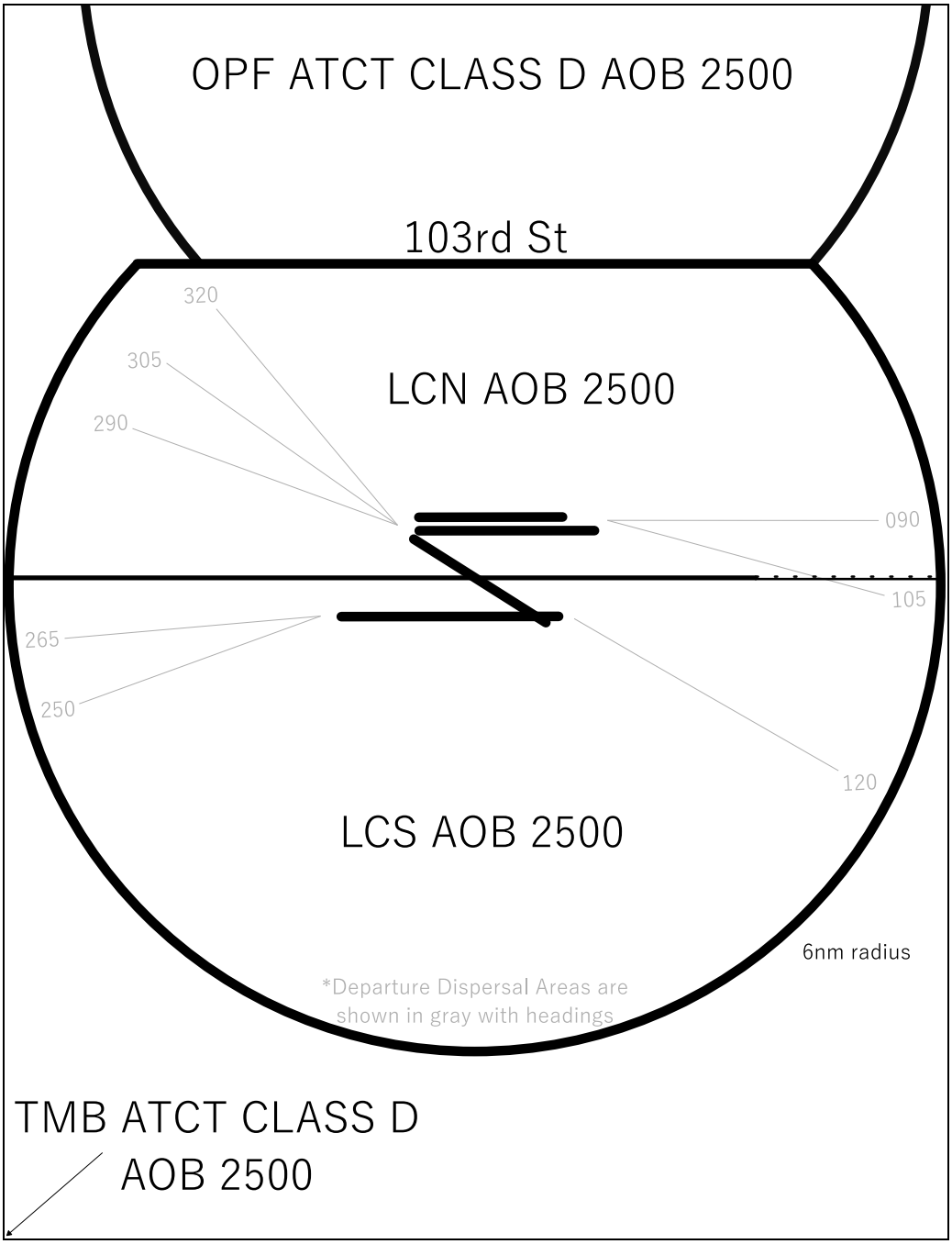

Figure 8 - Departure Dispersal Area and Local Control Assigned Airspace

For VATSIM simulation purposes only. No affiliation with FAA.

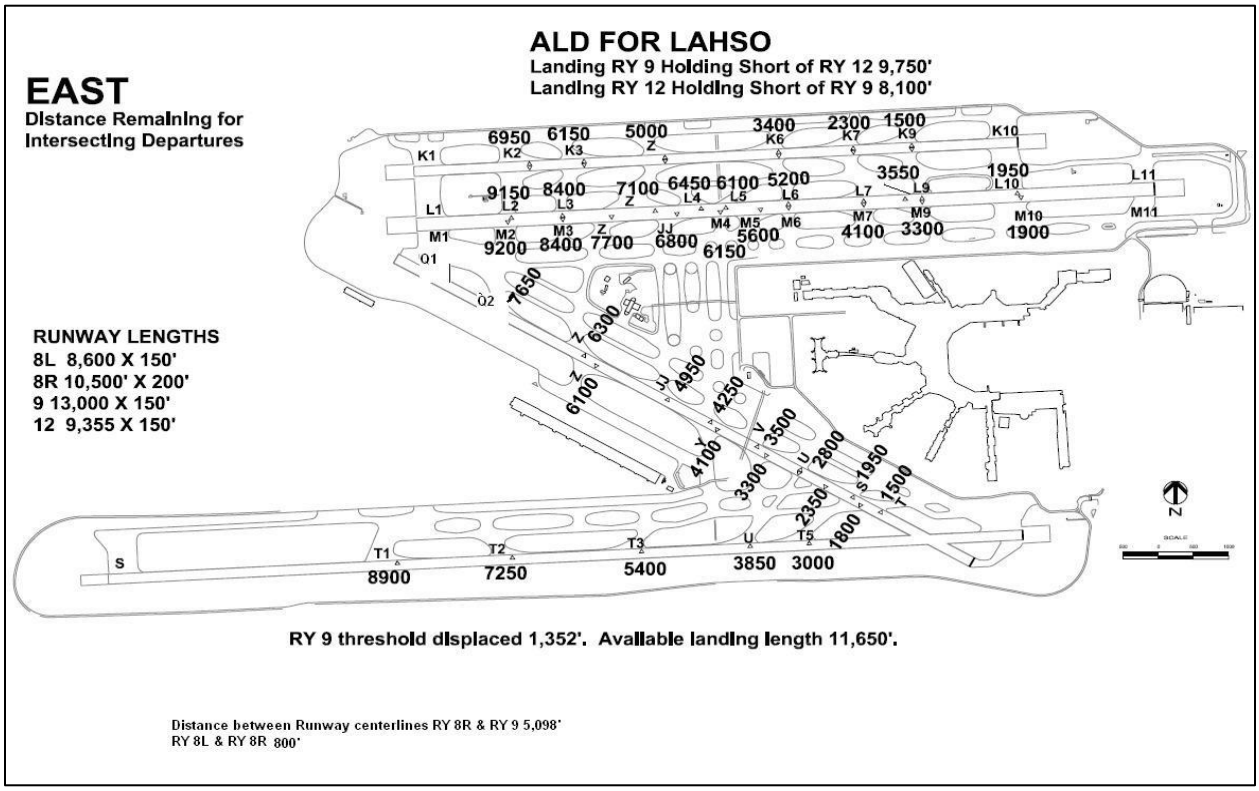

Figure 9 - Runway Distance Remaining - East Ops

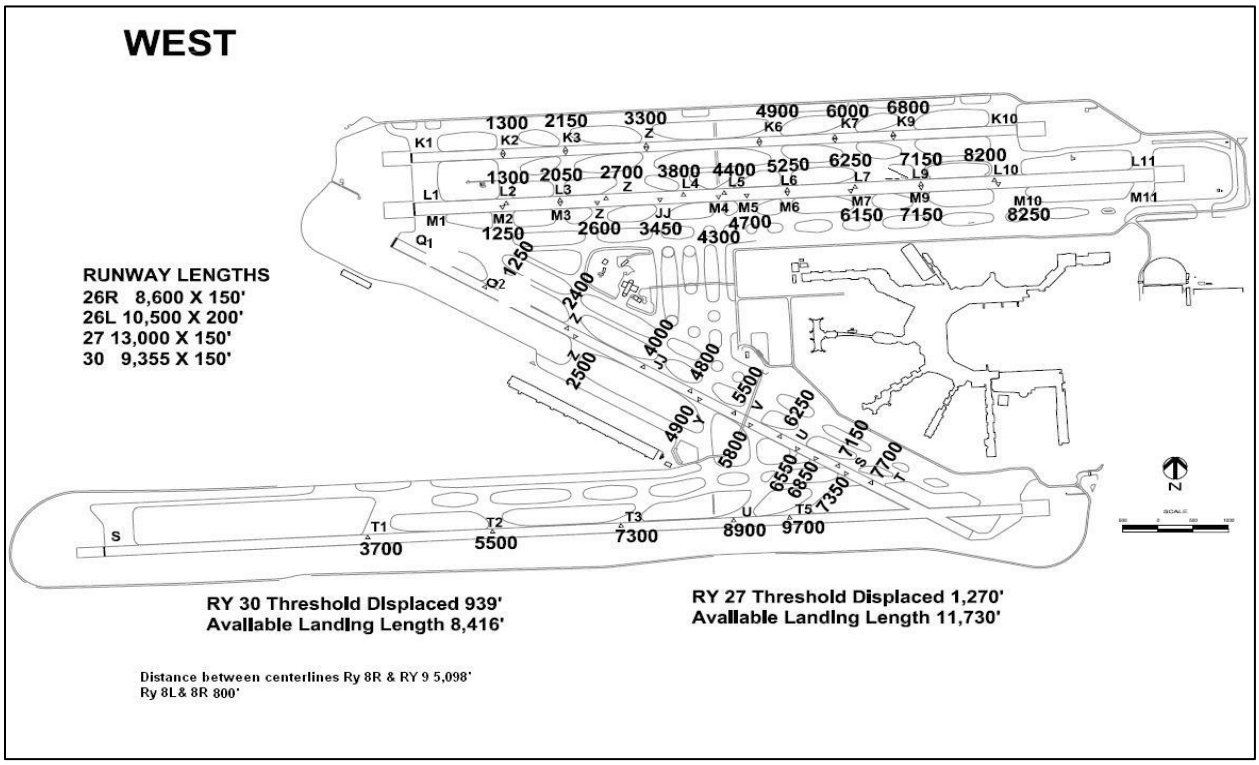

Figure 10 - Runway Distance Remaining - West Ops

For VATSIM simulation purposes only. No affiliation with FAA.

6. Approach & Departure Control

6.1 General Information

6.1.1 The following nonstandard transfers of control exist with Miami Center:

Routing[12]	TCP	Control Type
TEEKY#	TEEKY	Descent + 20° turns
FROGZ#	HARAP	Descent + 20° turns
BHHIA#	HULKY	Descent + 30° turns
SNBDR#	SNDBR	Descent + 30° turns
VIICE#	20 VIICE	Descent + 20° turns
OLAHS#	20 OLAHS	Descent + 20° turns

Table 6 – Nonstandard Transfers of Control with ZMA

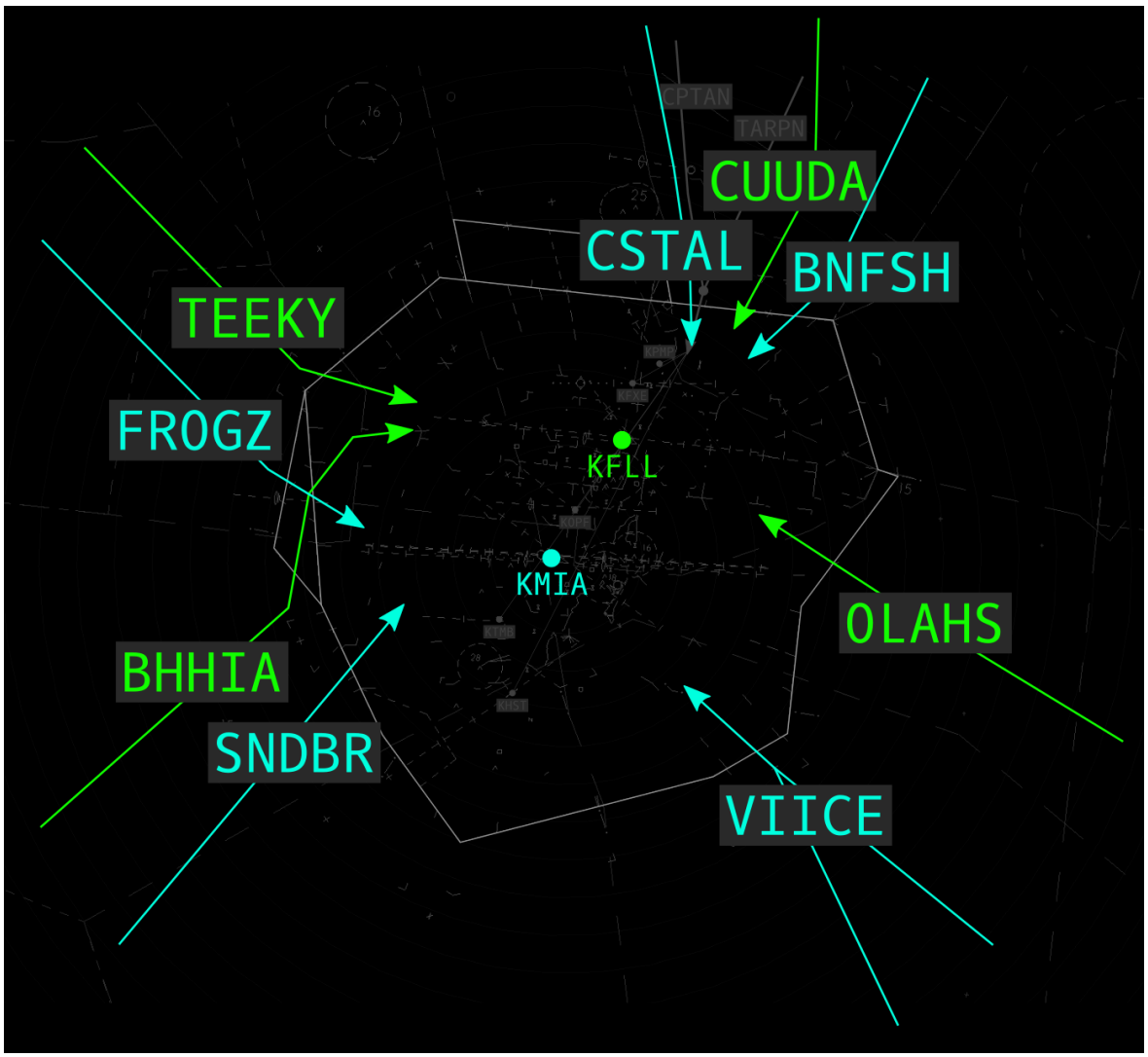

Figure 11 – Metroplex MIA & FLL STAR Structure

[12] All non-RNAV, prop, or legacy STARs/routes which enter Miami Approach in the same area are also granted the same transfers of control. For example, PALMZ#, SSCOT#, CYY#, and RSW V35 DHP would all be granted the same transfers of control as FROGZ#.

For VATSIM simulation purposes only. No affiliation with FAA.

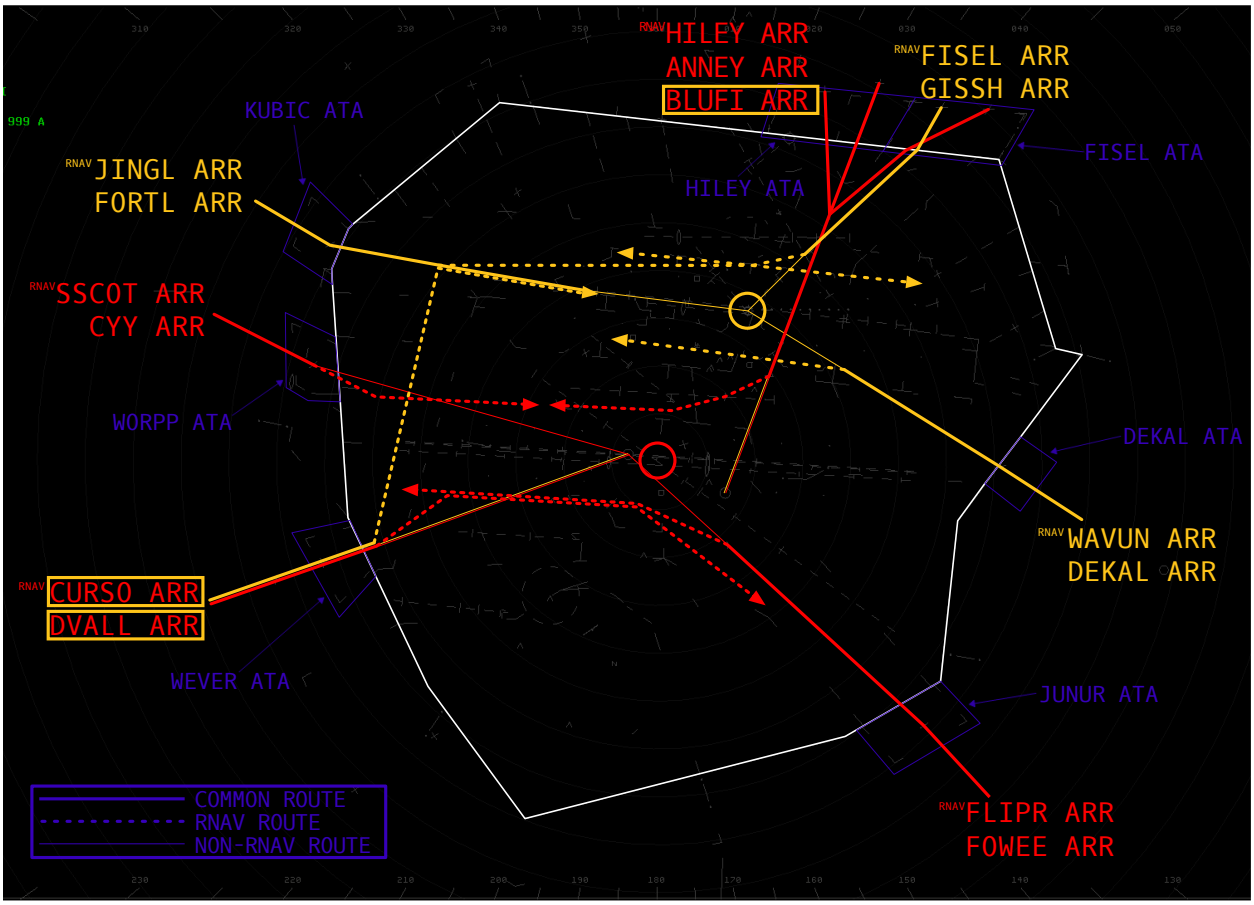

Figure 12 – Legacy MIA & FLL STAR Structure & Arrival Transition Areas (ATAs)

	Instrument Approach	Visual Approach	Visual Approach Following Traffic	Unable LAHSO
8L or 26L	RL	VL	AL	
8R or 26R	RR	VR	AR	
12 or 30	RX	VX	AX	XN / VXN / AXN
9	R9	V9	A9	9N / V9N / A9N
27	R27	V27	A27	

Table 7 - Miami Scratchpad Contractions

	Instrument Approach	Visual Approach
10L or 28L	FL	FVL
10R or 28R	FR	FVR

Table 8 - Fort Lauderdale Scratchpad Contractions

Approach Type	Scratchpad Entry
Instrument Approach	"I" plus runway, eg "I9L", "I13", etc
Visual Approach	"V" plus runway, eg "V9L", "V13", etc

Table 9 - All Satellite Airport Scratchpad Contractions

For VATSIM simulation purposes only. No affiliation with FAA.

6.2 NORTH FINAL (V) - MIA_V_APP - 124.850 (PRIMARY)

6.2.1 Vector arrivals to the appropriate final approach course and provide vertical separation until other approved separation has been applied to the adjacent final.

6.2.2 In East Ops, consider A to be in charge of the sequence when conducting parallel simultaneous dependent approaches between Runway 9 and 8L/8R.

6.2.3 In West Ops, consider V to be in charge of the sequence when conducting parallel simultaneous dependent approaches between Runway 27 and 26L/26R.

6.2.4 When simultaneous ILS approaches are in use, arrivals to 8R/26L shall not be descended below 4,000 feet until established on the localizer and within 15 NM of the airport.

6.2.5 When LAHSO is in effect, ensure either one of the following:

6.2.5.1 The aircraft landing on Runway 12 will be on 3nm final or further when the leading aircraft crosses the Runway 9 threshold.

6.2.5.2 All conditions for LAHSO have been met, and the aircraft landing on Runway 12 is able to land and hold short of Runway 9.

6.3 SOUTH FINAL (A) - MIA_A_APP - 133.05

6.3.1 Vector arrivals to the appropriate final approach course and provide vertical separation until other approved separation has been applied to the adjacent final.

6.3.2 In East Ops, consider A to be in charge of the sequence when conducting parallel simultaneous dependent approaches between Runway 9 and 8L/8R.

6.3.3 In West Ops, consider V to be in charge of the sequence when conducting parallel simultaneous dependent approaches between Runway 27 and 26L/26R.

6.3.4 When simultaneous ILS approaches are in use, arrivals to 9/27 shall be level at 3,000 feet no less than three (3) NM from the 8R/26L final approach course and established on the localizer prior to 15 NM.

6.4 NORTH FEEDER (N) - MIA_N_APP - 125.75

Works arrivals through WORPP and HILEY ATAs, developing a downwind feed for V. Arrivals to KFLL through WEVER go directly from center to N at 11,000, above the Miami WEVER arrivals being handled by S. In West Ops, N only works the HILEY arrivals.

6.4.1 Unless otherwise coordinated, feed V aircraft at the lowest altitude you own, at 210 KIAS.

6.5 SOUTH FEEDER (S) - MIA_S_APP - 120.5

Works arrivals through WEVER and JUNUR ATAs, developing a downwind feed for A. Arrivals to KFLL through WEVER enter approach airspace at 11,000, going directly into N. In West Ops, S also works the WORPP arrivals.

6.5.1 Unless otherwise coordinated, feed A aircraft at the lowest altitude you own, at 210 KIAS.

6.6 NORTH SATELLITE (Q) - MIA_Q_APP - 126.850

Works KOPF, KHWO, KFXE, KPMP, and KTNT arrivals and departures below all other traffic.

6.7 SOUTH SATELLITE(H) - MIA_H_APP - 125.25

Works KTMB, KHST, X51, and 07FA arrivals and departures beneath all other traffic.

For VATSIM simulation purposes only. No affiliation with FAA.

6.8 North Departure (D) - MIA_D_DEP - 119.450

Works departures bound for Miami north fixes (BNGOS, HURCN, FLMGO, ALTNN, FOLZZ), as well as FLL departures over BEECH and MAYNR. Accepts departures from W and Q, and merges with other departures to provide appropriate in trail spacing to center. In East Ops, works DEKAL arrivals through the departure corridor before handing off to J.

6.8.1 Do not alter the course of a departure aircraft from the tower assigned heading until assured of separation from any preceding/succeeding departures.

6.8.2 For aircraft assigned departure headings, until leaving 1,100 feet:

6.8.2.1 Runway 8L, 8R, 9: do not issue any right turns

6.8.2.2 Runway 12: do not issue any left turns

6.9 South Departure (W) – MIA_W_DEP – 125.5

Works departures bound for south fixes (KLADA, GWAVA, MAYNR). Accepts departures from D and H, and merges with other departures to provide appropriate in trail spacing to center.

6.9.1 Do not alter the course of a departure aircraft from the tower assigned heading until assured of separation from any preceding/succeeding departures.

6.9.2 For aircraft assigned departure headings, until leaving 1,100 feet:

6.9.2.1 Runway 8L, 8R, 9: do not issue any right turns

6.9.2.2 Runway 12: do not issue any left turns

6.10 Lauderdale North Departure (L) - MIA_L_DEP - 126.050

Works KFLL departures to FEALX. Provides initial departure service for KFLL departures to BEECH and MAYNR. Accepts departures from Q, and merges with other departures to provide appropriate in trail spacing to center. Works aircraft leaving the Miami TRACON area bound for KBCT or the Palm Beach area routed over ATONE.

6.11 Fisel (R) - MIA_R_APP - 133.770

Works arrivals through the FISEL ATA (KFLL and north satellites) and arrivals on the BLUFI STAR (to KFLL, KMIA, and all satellites). Has very limited airspace, and is very sensitive to the arrival feed from the center due to the lack of time and maneuvering room to develop a sequence.

6.11.1 Unless otherwise coordinated, feed F aircraft at the lowest altitude you own, at 210 KIAS.

6.12 Jingl (J) - MIA_J_APP - 118.100

Works JINGL and DEKAL arrivals bound for KFLL and north satellites, developing a downwind feed for J (landing KFLL) and Q (landing north satellites).

6.12.1 During east operations, J works the final for Runway 10R, and receives arrivals from the DEKAL ATA from D. Consider F to be in charge of developing the sequence.

6.12.2 Coordinate with R to feed arrivals to R, or directly to F with a point out to R, as appropriate. Feed aircraft to F or R at the lowest altitude you own, at 210 KIAS, unless otherwise coordinated.

6.13 Lauderdale Final (F) - MIA_F_APP - 133.720

6.13.1 Vector arrivals to the appropriate final approach course and provide lateral/vertical separation until other approved separation has been applied to the adjacent final.

6.13.2 During east operations, J works the final for Runway 10R, and F works the final for Runway 10L. Consider F to be in charge of developing the sequence.

For VATSIM simulation purposes only. No affiliation with FAA.

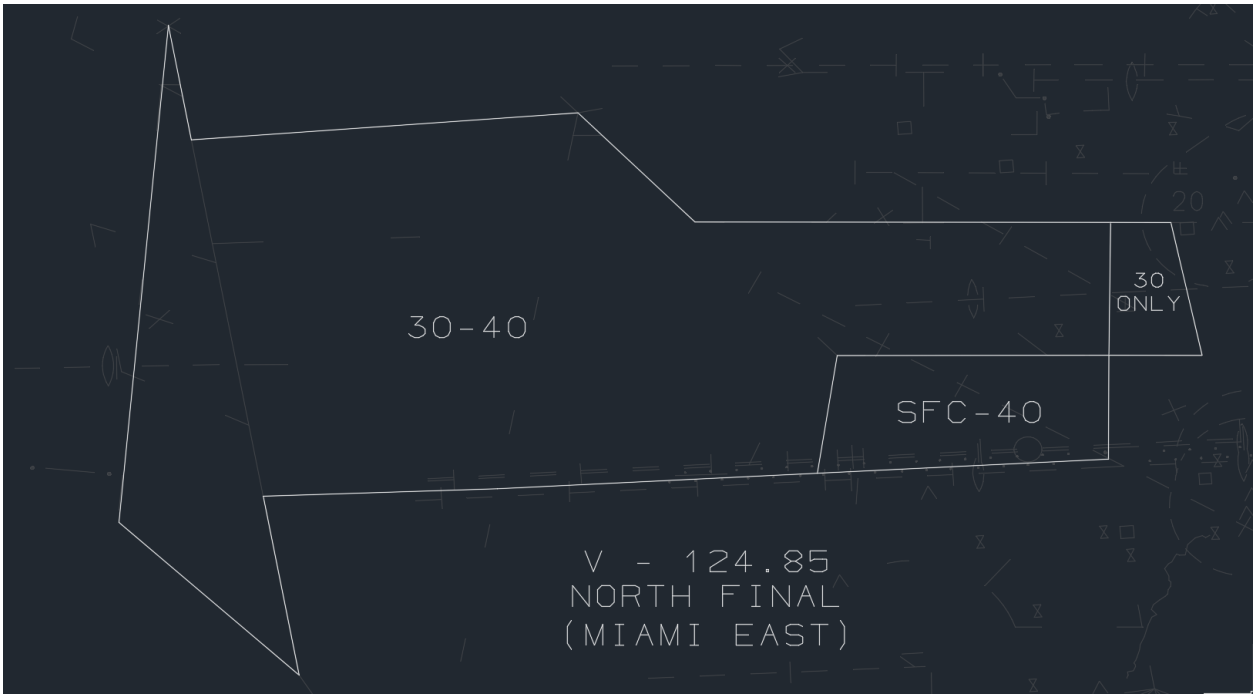

Figure 13 - North Final (V) - Miami East

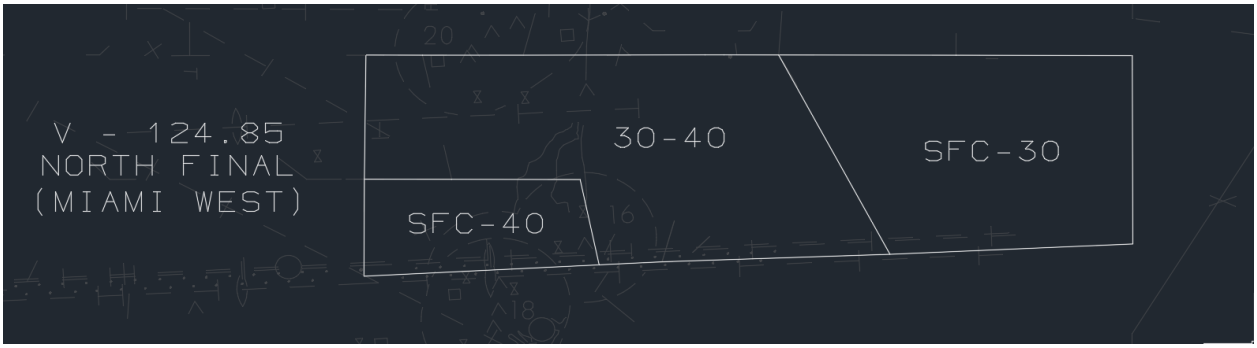

Figure 14 - North Final (V) - Miami West

For VATSIM simulation purposes only. No affiliation with FAA.

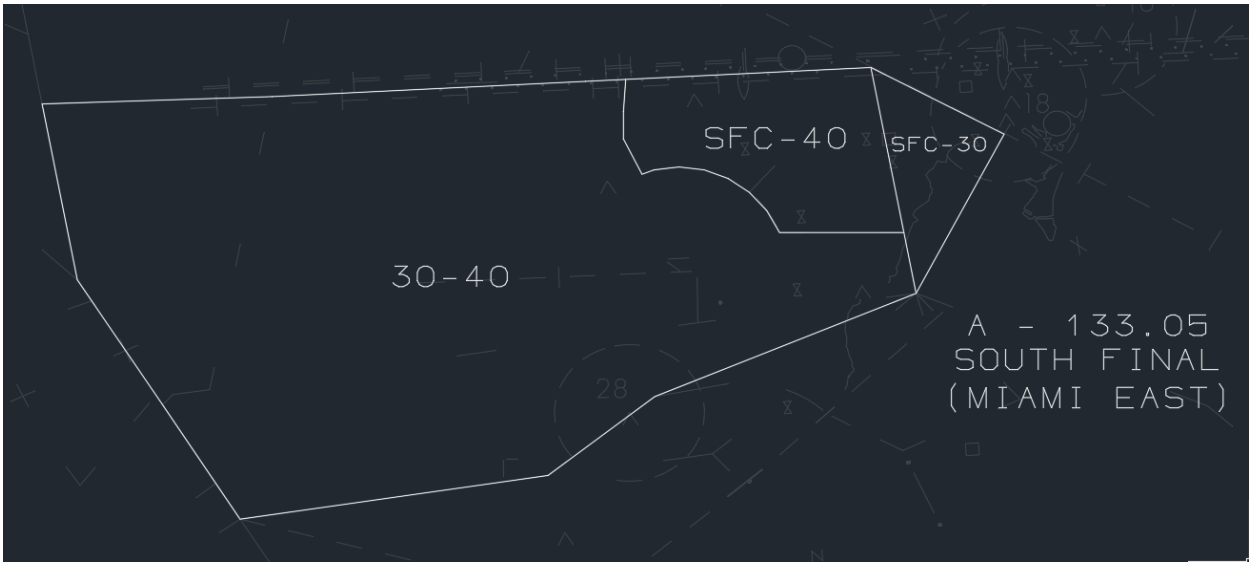

Figure 15 - South Final (A) - Miami East

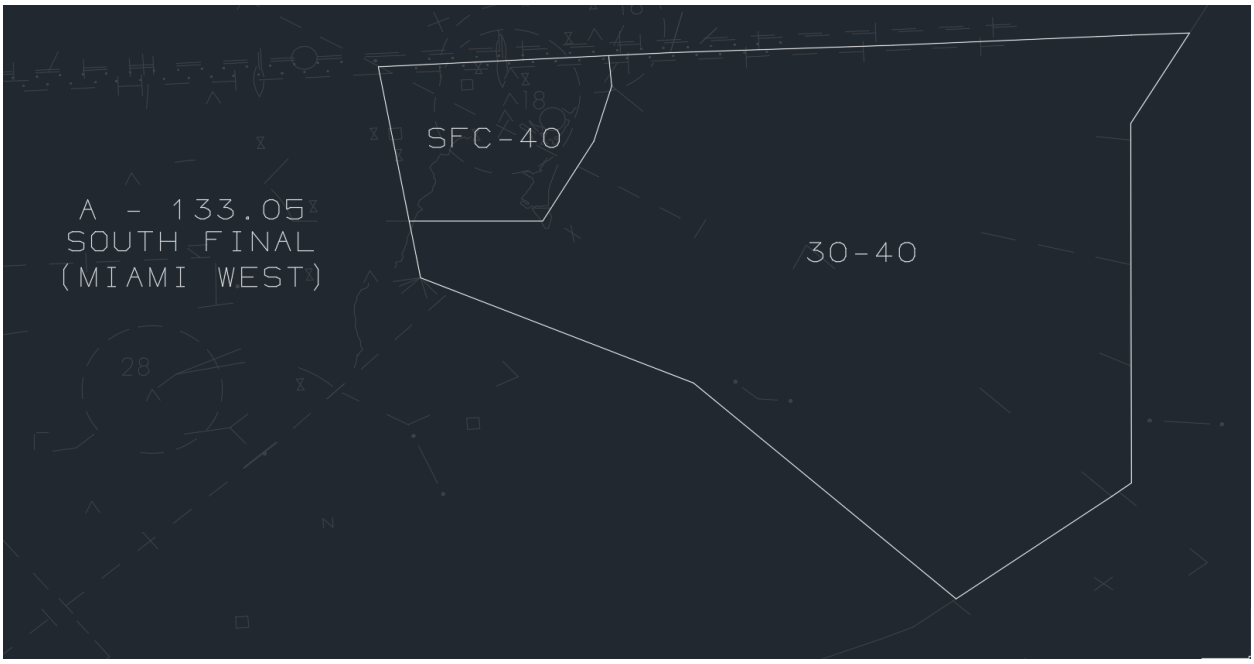

Figure 16 - South Final (A) - Miami West

For VATSIM simulation purposes only. No affiliation with FAA.

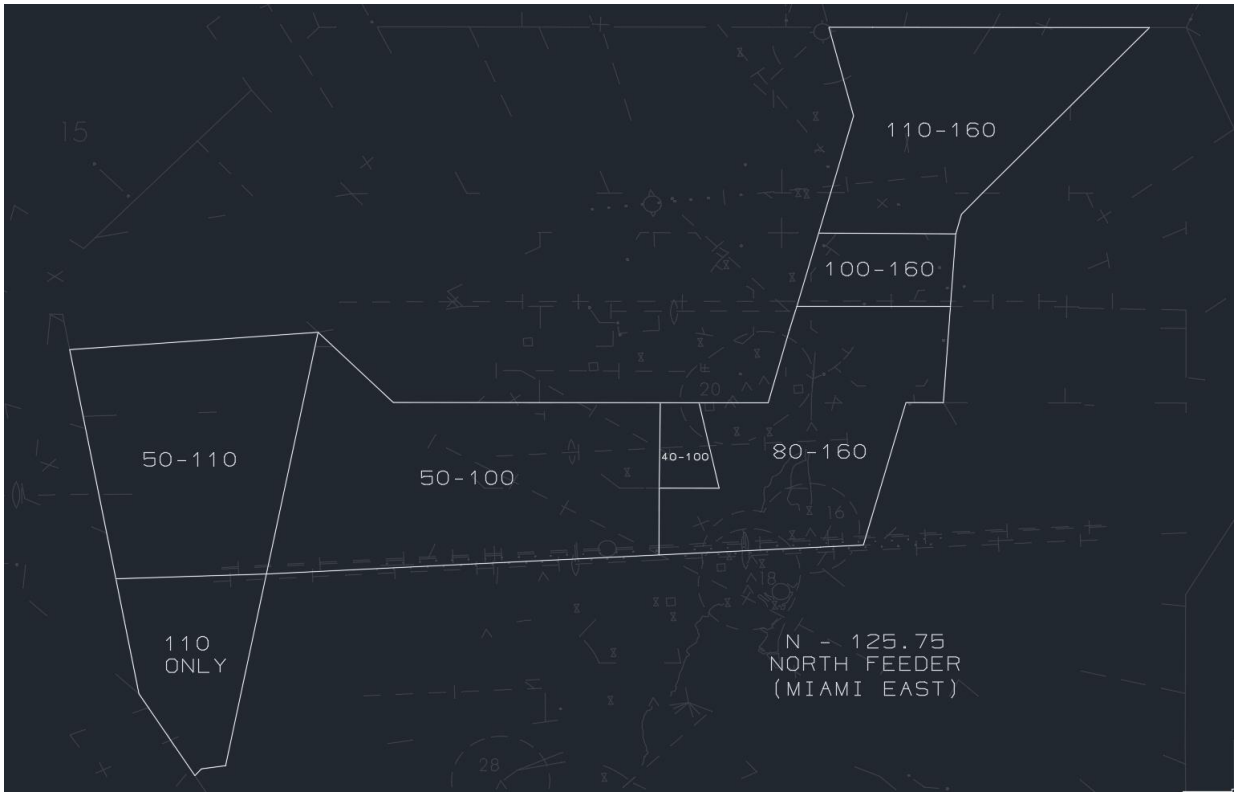

Figure 17 - North Feeder (N) - Miami East

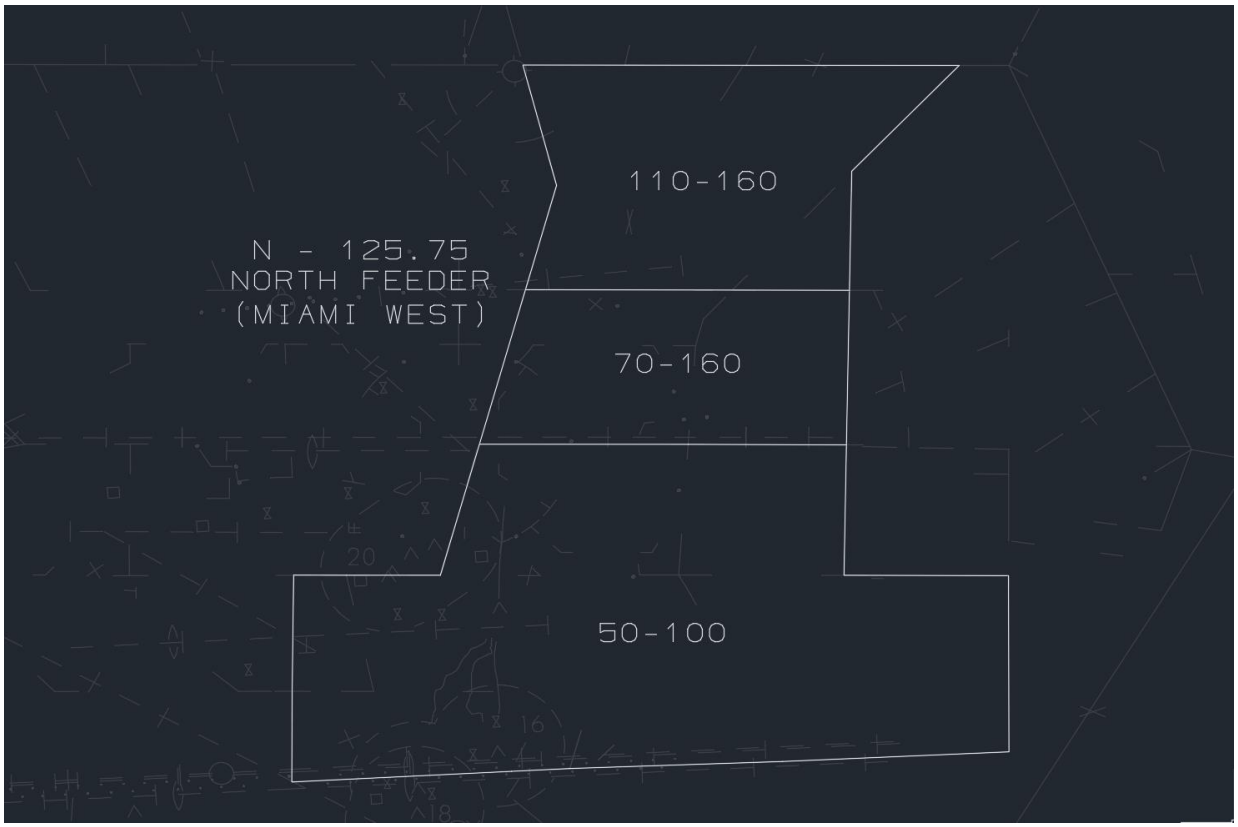

Figure 18 - North Feeder (N) - Miami West

For VATSIM simulation purposes only. No affiliation with FAA.

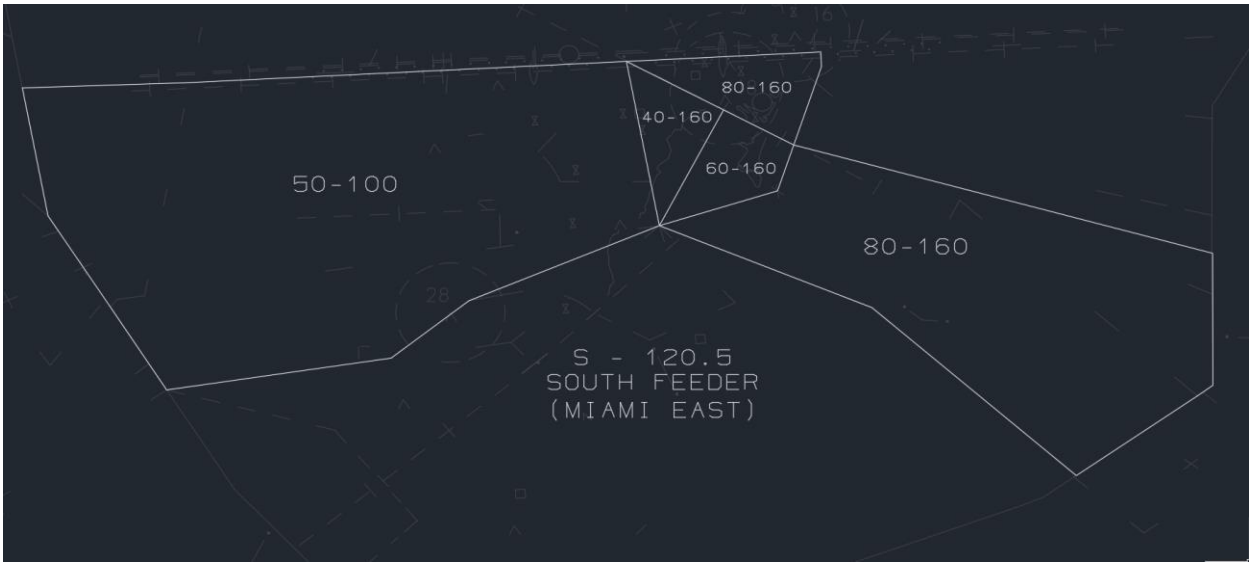

Figure 19 - South Feeder (S) - Miami East

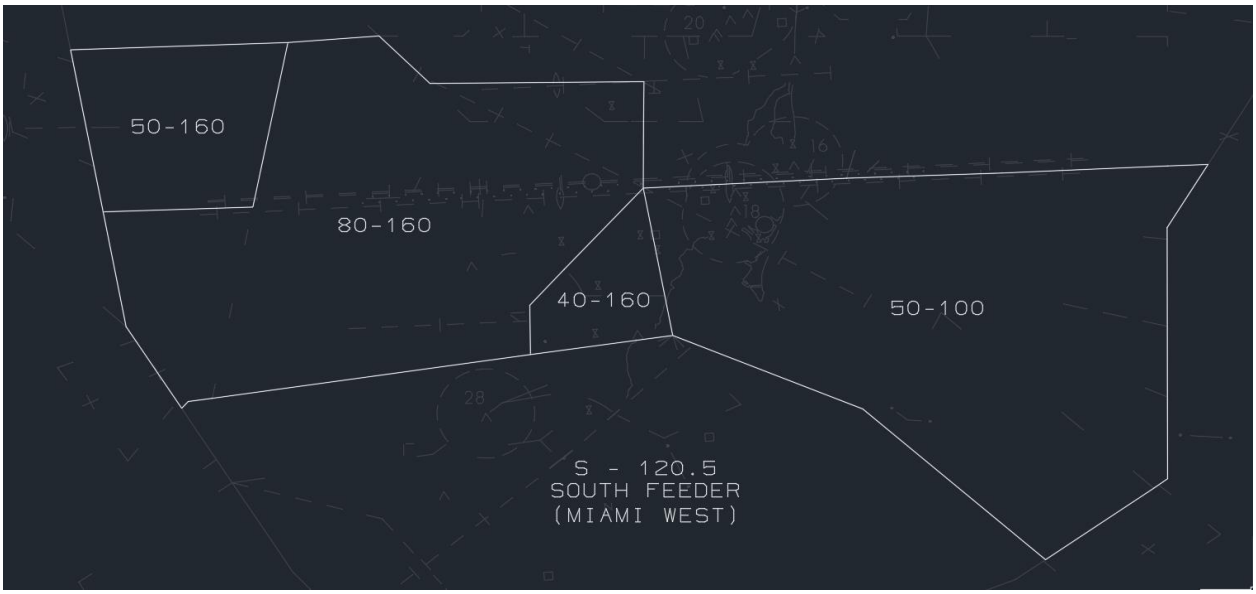

Figure 20 - South Feeder (S) - Miami West

For VATSIM simulation purposes only. No affiliation with FAA.

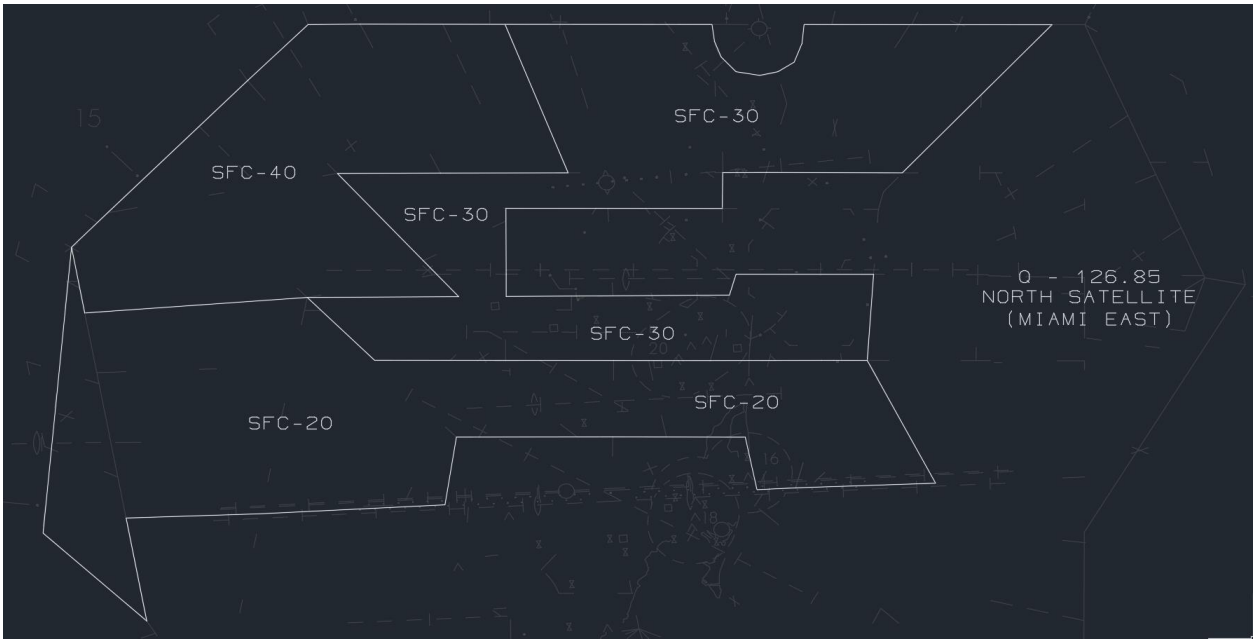

Figure 21 - North Satellite (Q) - Miami East

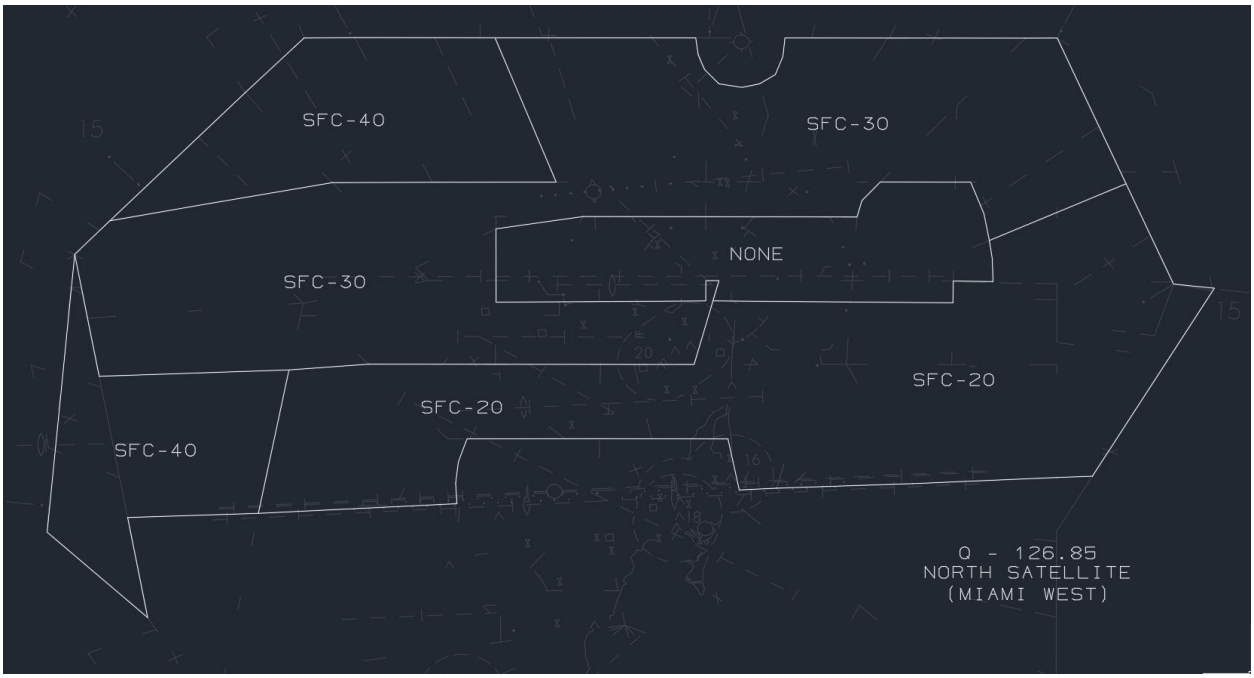

Figure 22 - North Satellite (Q) - Miami West

For VATSIM simulation purposes only. No affiliation with FAA.

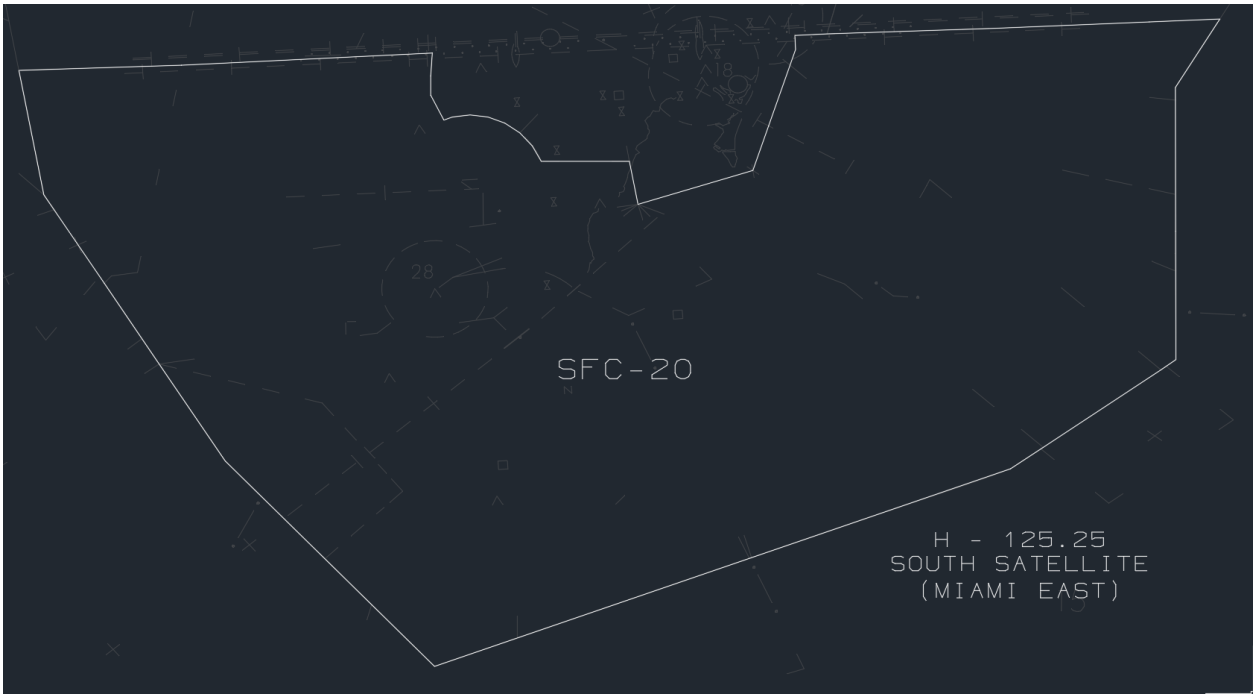

Figure 23 - South Satellite (H) – Miami East

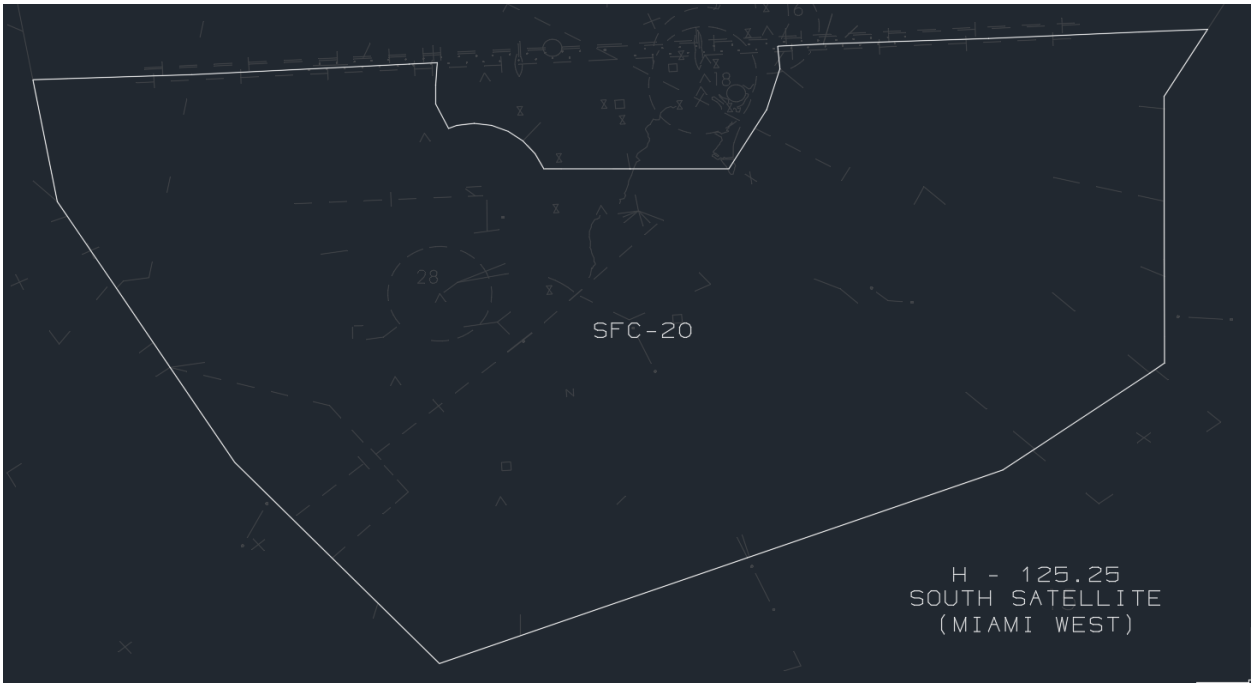

Figure 24 - South Satellite (H) – Miami West

For VATSIM simulation purposes only. No affiliation with FAA.

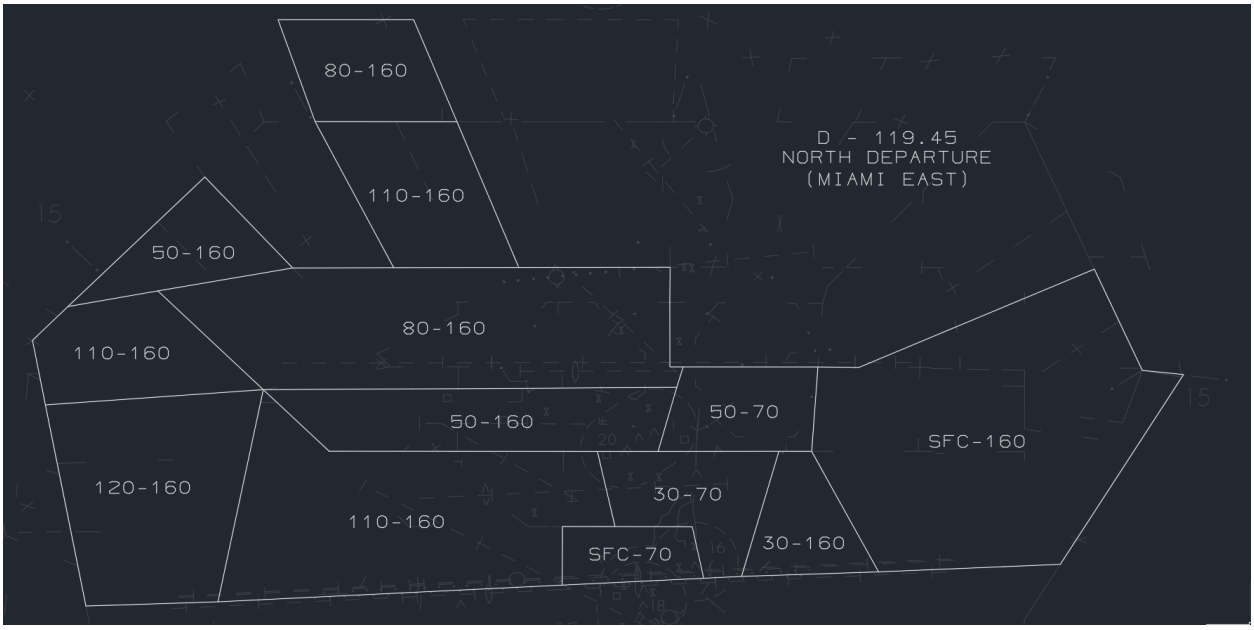

Figure 25 - North Departure (D) - Miami East

Figure 26 - North Departure (D) - Miami West

For VATSIM simulation purposes only. No affiliation with FAA.

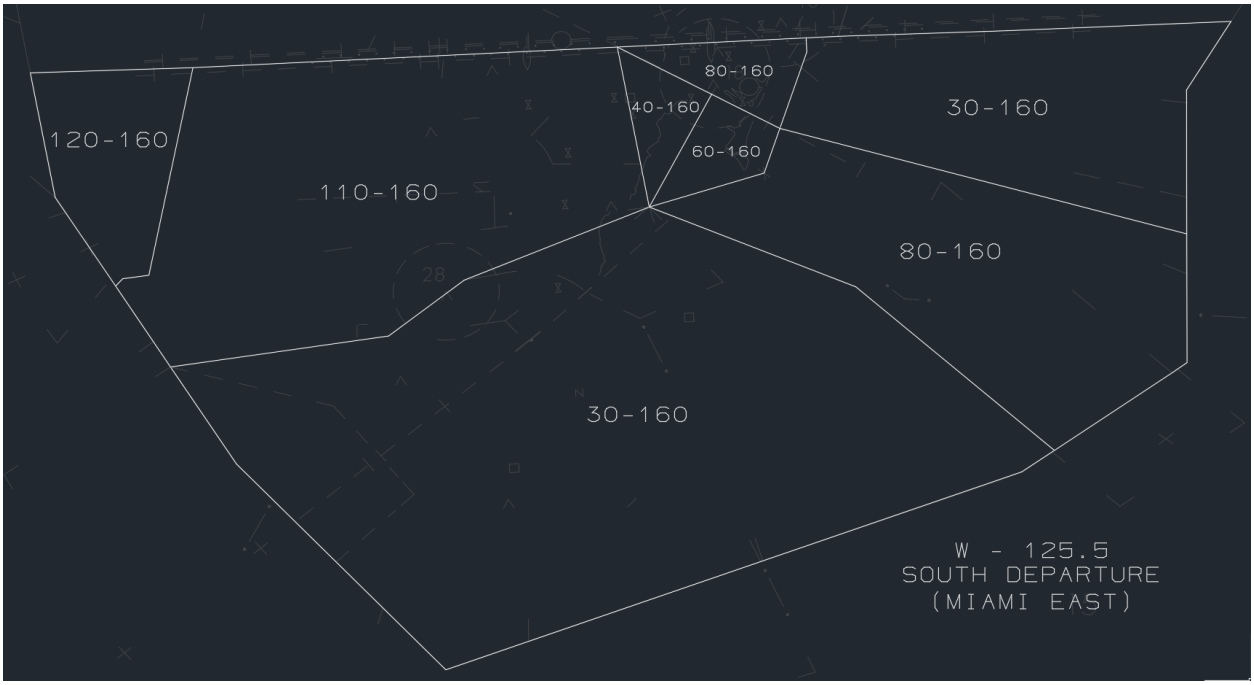

Figure 27 - South Departure (W) - Miami East

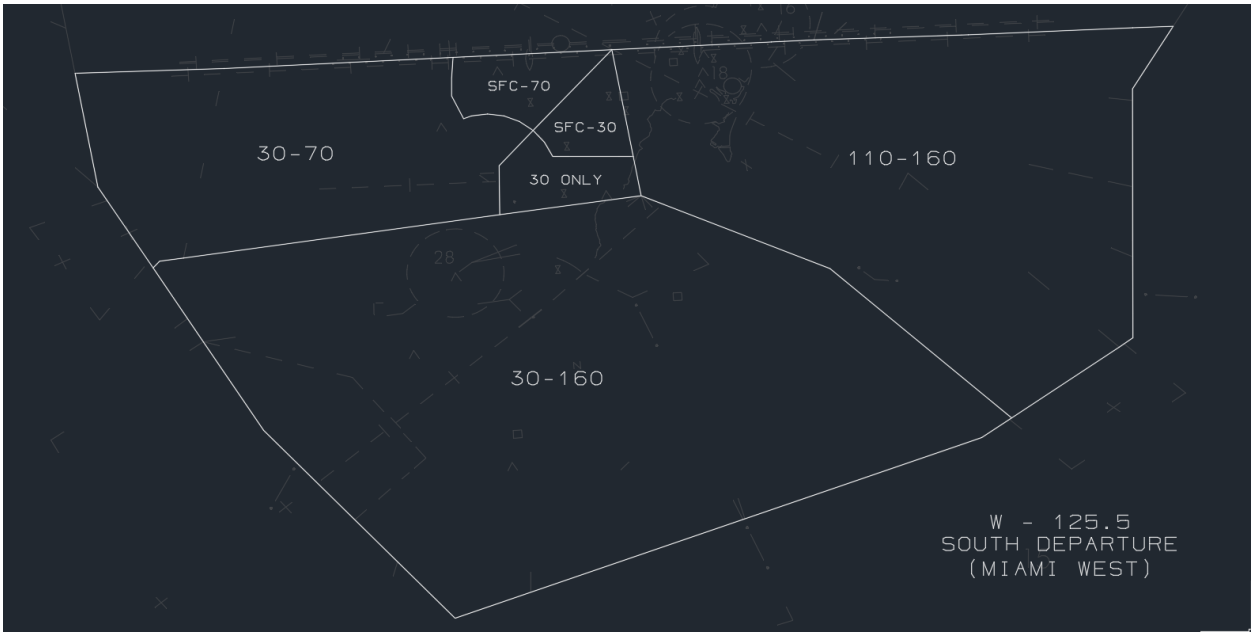

Figure 28 - South Departure (W) - Miami West

For VATSIM simulation purposes only. No affiliation with FAA.

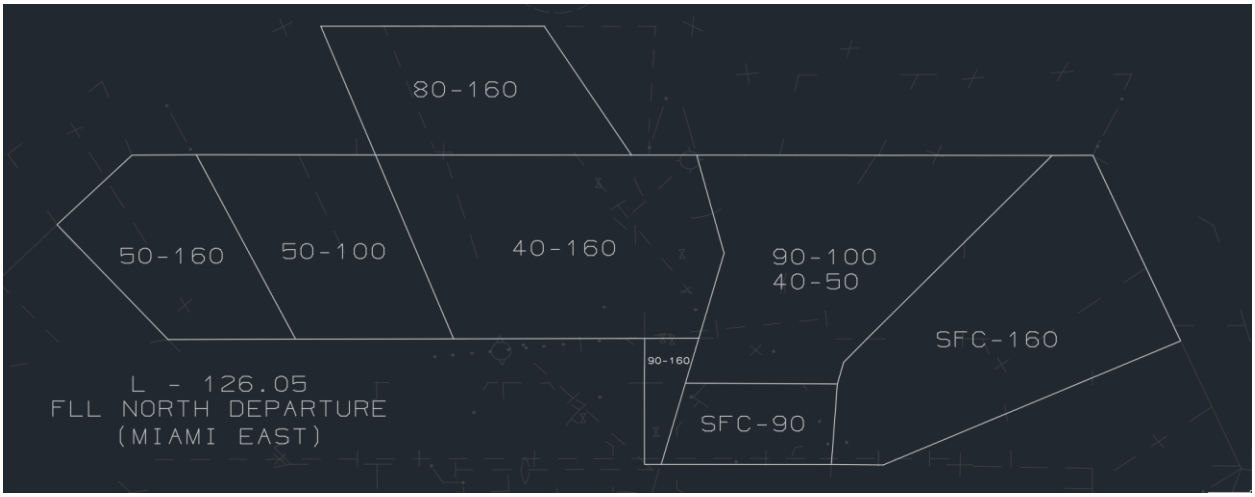

Figure 29 - Lauderdale North Departure (L) - Miami East

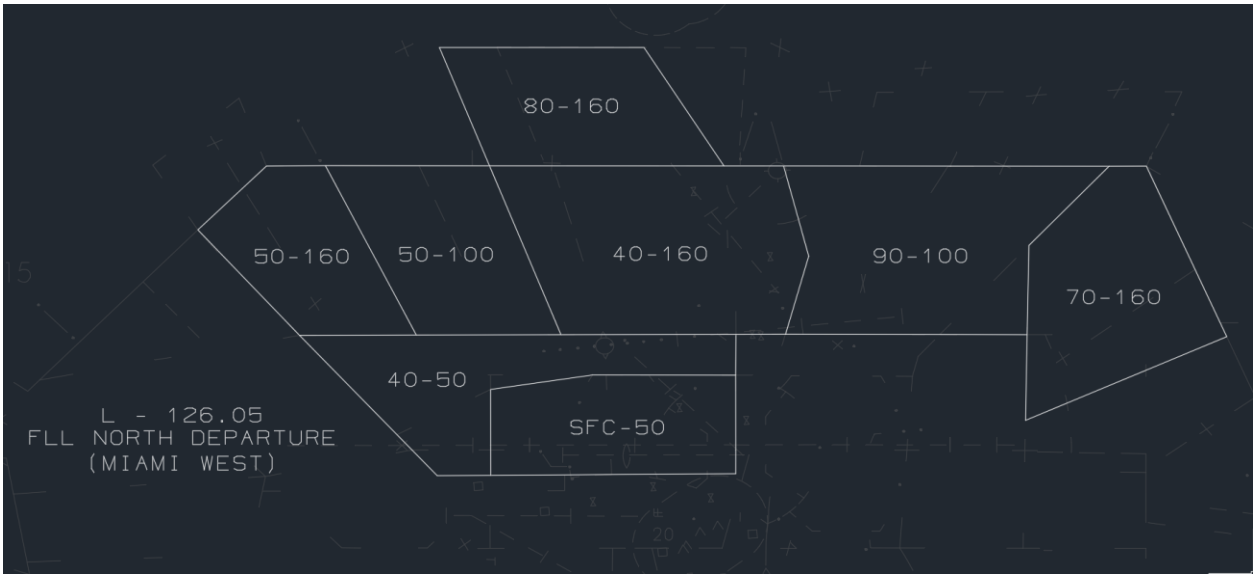

Figure 30 - Lauderdale North Departure (L) - Miami West

For VATSIM simulation purposes only. No affiliation with FAA.

Figure 31 - FISEL (R) - Miami East

Figure 32 - FISEL (R) - Miami West

For VATSIM simulation purposes only. No affiliation with FAA.

Figure 33 - JINGL (J) - Miami East

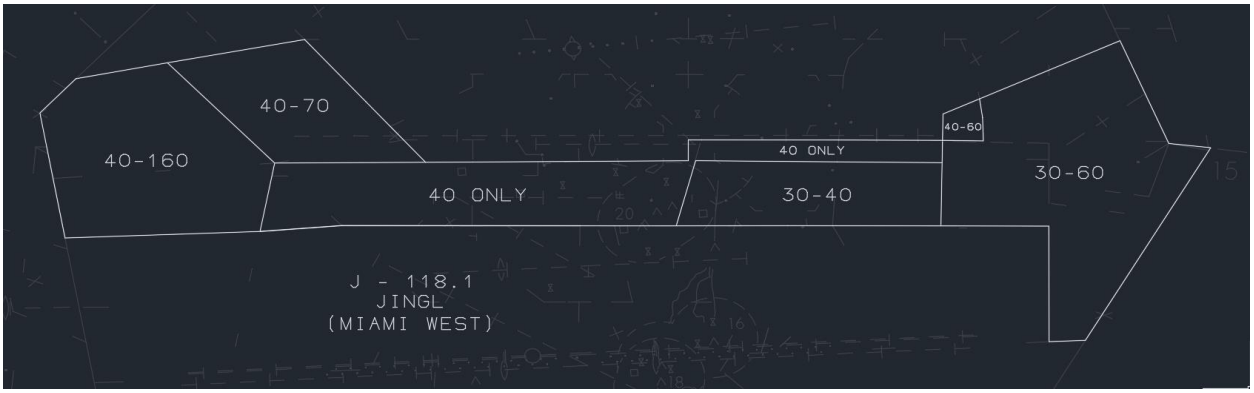

Figure 34 - JINGL (J) - Miami West

Figure 35 - Lauderdale Final (F) - Miami East

Figure 36 - Lauderdale Final (F) - Miami West

For VATSIM simulation purposes only. No affiliation with FAA.

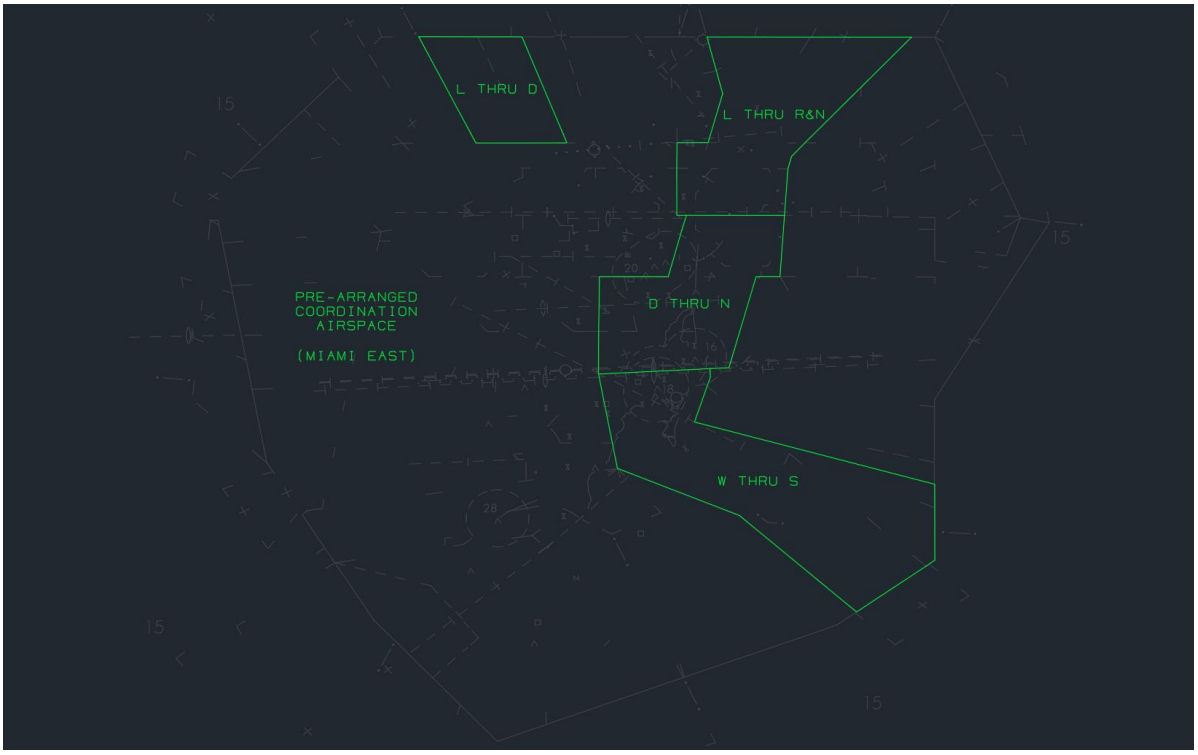

Figure 37 - Prearranged Coordination Airspace - Miami East
Only in these specified areas, you may climb/descend through the other controller's altitudes without coordination.
For example, "D THRU N" indicates D may "look-and-go" through N's altitudes only if there is no traffic.

Figure 38 - Prearranged Coordination Airspace - Miami West
Only in these specified areas, you may climb/descend through the other controller's altitudes without coordination.
For example, "D THRU N" indicates D may "look-and-go" through N's altitudes only if there is no traffic.

For VATSIM simulation purposes only. No affiliation with FAA.