SUBJ: Fort Myers ATCT & TRACON SOP

This order prescribes local air traffic control procedures and phraseology for use by Fort Myers Air Traffic Control Tower personnel on the VATSIM Network. This is not intended for real-world use.

Routes in this document have been formatted to imply their applicability in a few ways:

1. **Bold routing** requires the aircraft to be RNAV/RNP equipped and capable.
2. Blue routing indicates a metroplex route, which will require aircraft with updated nav data.
3. Gray routing indicates a *non*-metroplex route, which all aircraft should have.
4. ~~Gray strikethrough~~ routing indicates "legacy routing", which only exists in old AIRACs.

Jason Cochran
Facility Engineer
VATSIM Miami ARTCC

Shane Friedman
Air Traffic Manager
VATSIM Miami ARTCC

1. PURPOSE

This order applies to VATSIM Air Traffic Control Specialists who control air traffic at the Fort Myers Air Traffic Control Tower or TRACON. All concerned personnel shall familiarize themselves with the provisions of this order which pertain to their operational responsibilities.

2. CANCELLATION

This document replaces and cancels ZMA Directive 6, Version A, dated as effective on 05/03/2020.

TABLE OF CONTENTS

1. PURPOSE 2
2. CANCELLATION 2
3. GENERAL INFORMATION 3
3.1 HOURS OF OPERATION 3
4. CLEARANCE DELIVERY 4
4.1 FREQUENCIES 4
4.2 GENERAL RESPONSIBILITIES 4
4.3 INITIAL ALTITUDES 4
4.4 GATES WITHOUT NON-MOVEMENT PUSHBACK AREAS 4
4.5 PREFERRED ROUTINGS & ALTITUDE CONSTRAINTS 4
5. GROUND CONTROL (GC) 6
5.1 FREQUENCIES 6
5.2 GENERAL RESPONSIBILITIES 6
5.3 RUNWAY CROSSING COORDINATION 6
6. LOCAL CONTROL (LC) 7
6.1 FREQUENCIES 7
6.2 GENERAL RESPONSIBILITIES 7
6.3 DEPARTURE HANDLING 7
6.4 RUNWAY USAGE 7
7. APPROACH & DEPARTURE CONTROL 9
7.1 GENERAL 9
7.2 EAST (E) - RSW_E_APP – 126.80 (PRIMARY) 9
7.3 WEST (W) - RSW_W_APP – 125.15 9
7.4 SOUTH (S) - RSW_S_APP – 119.75 9
7.5 FINAL (F) - RSW_F_APP – 134.42 9

For VATSIM simulation purposes only. No affiliation with FAA.

3. General Information

3.1 Hours of Operation

3.1.1 The real-world Fort Myers TRACON and Fort Myers Tower is operational daily from 0600 local to 0000 local. Between 0000 local and 0600 local, control of TRACON reverts to Miami Center, and the class Charlie airspace reverts to class E airspace (i.e. one-in one-out).

3.1.2 Real-world hours of operation do not prohibit controllers from providing services at KRSW during these hours.

For VATSIM simulation purposes only. No affiliation with FAA.

4. Clearance Delivery

4.1 Frequencies

4.1.1 Clearance Delivery (CD) – RSW_DEL – 132.075 – Fort Myers Clearance Delivery

4.2 General Responsibilities

4.2.1 CD controllers shall be familiar with SIDs and valid departure fixes. Further information can be found in Table 1 on page 5.

4.2.2 For VFR departures:

4.2.2.1 Assign VFR departures a beacon code and issue the appropriate departure frequency.

4.2.2.2 Create a VFR flight plan including aircraft type/suffix, origin airport KRSW, direction of flight, and intended VFR cruise altitude.

4.2.2.3 Indicate in the flight plan's remarks section whether or not the pilot requests flight following.

4.2.3 For aircraft parked on gates listed in Section 4.4, instruct aircraft to contact GC "when ready to push" immediately upon correct readback of their clearance. Aircraft parked on any other gate may be advised to push and start at pilot's discretion, unless otherwise requested by GC.

4.3 Initial Altitudes

4.3.1 IFR – Assign the following altitudes (or the requested altitude, if lower):

4.3.1.1 South Departure Fixes - 3000

4.3.1.2 North Departure Fixes - 4000

4.3.2 VFR – Assign "maintain VFR at or below 2,500".

4.4 Gates Without Non-Movement Pushback Areas

The following gates do not have the ability to push back completely within non-movement areas, and require a ground control clearance to push back onto an active taxiway. For these gates, instruct aircraft to contact GC "when ready to push" immediately upon correct readback of their clearance. Aircraft parked on any other gate may be advised to push and start at pilot's discretion, unless otherwise requested by GC.

4.4.1 Gates B7 & B9 (onto G for Spot 7)

4.4.2 Gates C8 & C9 (onto G for Spot 4)

4.4.3 Gate D10A (onto G for Spot 2)

4.5 Preferred Routings & Altitude Constraints

4.5.1 Clear IFR departures via an appropriate Valid Departure Fix (VDF), with the corresponding[1] SID, as prescribed in *Table 1*.

4.5.2 For destinations listed in table, controllers shall ensure all aircraft are assigned the specified routes and altitude (unless otherwise coordinated with the affected controllers).

[1] Aircraft shall be assigned the SID which appears in the same row as the chosen VDF. For example, a departure routed over MARCI shall be assigned "SCUBY# MARCI".

For VATSIM simulation purposes only. No affiliation with FAA.

SID	GROUP	VDF	NOTES
CSHEL#	N	CSHEL	
ALICO#	N	CSHEL[2]	
		DYLYN[3]	
		SABEE	To TPAz only
MOOKY#	S	MOOKY	
SCUBY#	S	MARCI	

Table 1 – Valid Departure Fixes (VDFs) & Corresponding SIDs

DESTINATION	ROUTING REQUIREMENTS	ALTITUDES
KMIA & Sats	**FROGZ FROGZ#** PALMZ PALMZ# ~~CYY SSCOT#~~ CYY CYY#	AOB 13,000
KFLL & Sats	**TEEKY TEEKY#** FORTL FORTL# KUBIC DCT	AOB 13,000
TPA TRACON	SABEE PIE DCT KSRQ/KVNC: SABEE DCT	AOB 10,000
MCO TRACON	**CSHEL FAZES JOKRS#** ROGAN MINEE MINEE# **CSHEL** ~~**LAL COSTR#**~~	AOB FL210
DAB TRACON	**CSHEL# LAL** KNEED V152 OMN DCT ROGAN V7 LAL V152 OMN DCT	AOB FL210
PBI TRACON	**DYLYN SHRVY SHRVY#** **DYLYN** BOBIO DCT LBV V492 PBI DCT	AOB 13,000
EYW TRACON	MARCI V225 EYW DCT	AOB FL200
MYNN & Sats	**DYLYN** ZFP BR63V ZQA DCT RSW V599 THNDR PBI BR63V ZQA DCT	AOB FL290
MYGF	**DYLYN** ZFP BR63V ZFP DCT RSW V599 THNDR PBI BR63V ZFP DCT	AOB FL230
MYAM / MYAT	**DYLYN** ZFP BR63V ZFP DCT RSW V599 THNDR PBI BR63V ZFP DCT	---
KMTH	MARCI DCT	AOB FL200
MUHA	MUHA LANDING EAST: MARCI CANOA [**ENTRY#** / AVERA#] MUHA LANDING WEST: MARCI CANOA JUGAR#	---

Table 2 – Preferred Departure & Arrival Routes (PDARs)

[Metroplex Route] / [Legacy Route]

[2] Any aircraft unable to navigate to the CSHEL waypoint may be assigned ROGAN in lieu of CSHEL.
[3] Any aircraft unable to navigate to the DYLYN waypoint may be assigned THNDR in lieu of DYLYN.

For VATSIM simulation purposes only. No affiliation with FAA.

5. Ground Control (GC)

5.1 Frequencies

5.1.1 Ground Control (GC) – RSW_GND - 121.900 – Fort Myers Ground

5.2 General Responsibilities

5.2.1 Ensure positive separation of taxiing traffic.

5.2.2 To the extent practical, prevent any undue delay to taxiing traffic.

5.2.3 To the extent practical, sequence departing aircraft by departure gate.

5.2.4 Ensure runway exits are kept clear and arriving aircraft are moved as soon as possible to ensure all exits are available to subsequent arrivals.

5.2.5 Ensure timely transfer of communications to the subsequent GC or LC frequency such that aircraft may continue their taxi without any undue delay.

5.2.6 When operating as Fort Myers Ground, do not provide ramp control services within nonmovement areas, except in a purely advisory nature.

5.2.7 GC areas of responsibility include all movement areas excluding runway 6-24. For further information on non-movement areas, see Figure 1 on page 8.

5.2.8 For aircraft seeking pushback from gates listed in Section 4.3, issue the pushback clearance and a direction to face (or a direction for the tail). Keep in mind that all regional jets will push straight back.

"ASH1552, PUSHBACK ONTO H APPROVED, STRAIGHT BACK"
"SWA2638, PUSHBACK ONTO G APPROVED, [FACE NORTHWEST / TAIL SOUTHEAST]"

5.3 Runway Crossing Coordination

5.3.1 When requesting a runway crossing from LC, specify the runway and the point at which crossing will occur, using the format of "Cross [rwy] at [intersection]?". LC's approval indicates approval for only one aircraft to cross as specified, unless "...with 2" is stated by GC and read back by LC in the original crossing request.

5.3.2 When the traffic is clear of the runway, advise LC "Runway [rwy], crossing complete".

5.3.3 LC may grant GC "crossing blankets," which means GC may cross runway 6-24 without coordination with LC. If GC has been granted crossing blankets, and has an aircraft who will enter and cross the runway when landing traffic is within a 2nm final for the runway, GC shall announce to LC that they are "crossing [rwy]" about 15 seconds prior to the aircraft entering the runway. GC need not obtain acknowledgement by LC.

For VATSIM simulation purposes only. No affiliation with FAA.

6. Local Control (LC)

6.1 Frequencies

6.1.1 Local Control – RSW_TWR – 128.75 – Fort Myers Tower

6.2 General Responsibilities

6.2.1 Ensure positive separation of aircraft within LC assigned airspace and movement areas.

6.2.2 Issue RVR information as required.

6.2.3 B757, Heavy, and Super aircraft are not authorized intersection departures for any runway when the full length is usable.

6.2.4 In the event of a missed approach or balked landing, LC shall coordinate headings and altitudes that will ensure separation from all other known/observed traffic, and advise the departure controller.

6.3 Departure Handling

6.3.1 LC may issue departure headings in accordance with Table 3 and Table 4.

6.3.1.1 Obtain departure control's approval before assigning departure headings. This coordination is not done for each aircraft; only once for approval of the concept. Once approved by departure, LC may assign allowable headings to all departures without coordination.

Fix Group	Heading(s)	Blocks
N	040	---
	(RWY)	CSHEL#, ALICO#
S	080	---
	100	MOOKY#, SCUBY#

Table 3 - Departure Headings - East Operations

Fix Group	Heading(s)	Blocks
N	260 / 280	CSHEL#, ALICO#
S	(RWY)	MOOKY#
	220	SCUBY#
	200	---

Table 4 - Departure Headings - West Operations

Runway 6/24 Intersections: Takeoff Distance Remaining		
Intersection	Rwy 6	Rwy 24
F1	12,000	None
F2	8,500	3,400
F3	7,000	4,950
F4	6,650	5,300
F5	5,200	6,750
F6	4,800	7,150
F7	4,000	7,950
F8	1,650	10,300
F9	None	12,000
A1	12,000	None
A2	9,950	2,050
A4	8,500	3,450
A5	6,950	5,000
A6	5,150	6,800
A7	4,000	7,950
A8	2,750	9,200
A9	1,650	10,300
A10	None	12,000

Table 5 - Runway Remaining Distances

6.4 Runway Usage

6.4.1 Unless the forecast indicates an imminent change, in wind less than 5 knots, east operations shall be conducted (landing and departing runway 6).

For VATSIM simulation purposes only. No affiliation with FAA.

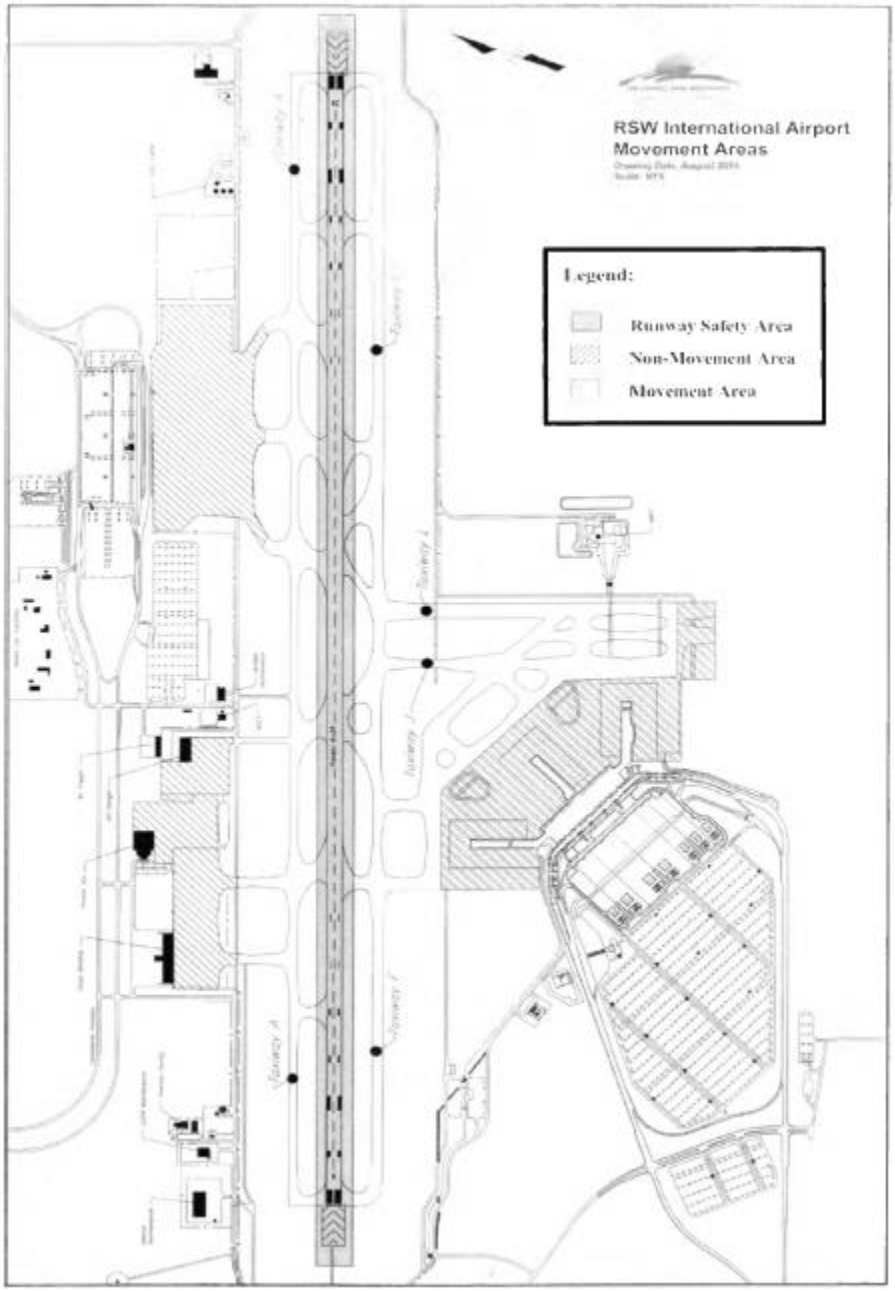

Figure 1 - Airport Diagram

For VATSIM simulation purposes only. No affiliation with FAA.

7. Approach & Departure Control

7.1 General

All sectors have control for turns up to 30 degrees from all Fort Myers TRACON sectors.

7.2 East (E) - RSW_E_APP – 126.80 (Primary)

Works SHFTY and WINCO arrivals, developing a feed for F, and CSHEL and DYLYN DTA departures. In West Ops, descends aircraft to 5000 and coordinates with F on sequencing actions. Sends aircraft to F as soon as feasible once the requested actions (if any) have been initiated.

7.3 West (W) - RSW_W_APP – 125.15

Works TYNEE arrivals, developing a feed for F, and arrivals/departures in and out of KPGD. In East Ops, coordinates frequently with F on required sequencing actions. Occasional TEC route traffic is seen to Tampa TRACON (via SABEE DTA) and from Tampa TRACON (via SRQ).

7.4 South (S) - RSW_S_APP – 119.75

Works arrivals/departures in and out of KAPF, KMKY, and KIMM, as well as arrivals from the south over GOODY. Works departures over MOOKY, MARCI and to the Miami TRACON (via CYY and JINGL/KUBIC).

In East Ops, coordinates frequently with F on requested sequencing actions when they are able to accept GOODY arrivals vectored directly on to the base. Otherwise, S will instead coordinate with E to put GOODY arrivals in line with WINCO/SHFTY arrivals to provide F with a single downwind feed.

7.5 Final (F) - RSW_F_APP – 134.42

Issues approach clearances within delegated airspace for Southwest Florida International and Page Field arrivals, as appropriate. Proactively coordinates with feeder sectors on requested headings/speeds/altitudes as needed before accepting handoffs. This coordination is often nearly continuous if still accepting aircraft vectored directly on to base legs. When volume necessitates, request all arrivals to be fed midfield downwind at 210 knots to reduce complexity and minimize the needed coordination. Transfer of communications to LC shall be completed no later than the final approach fix.

For VATSIM simulation purposes only. No affiliation with FAA.

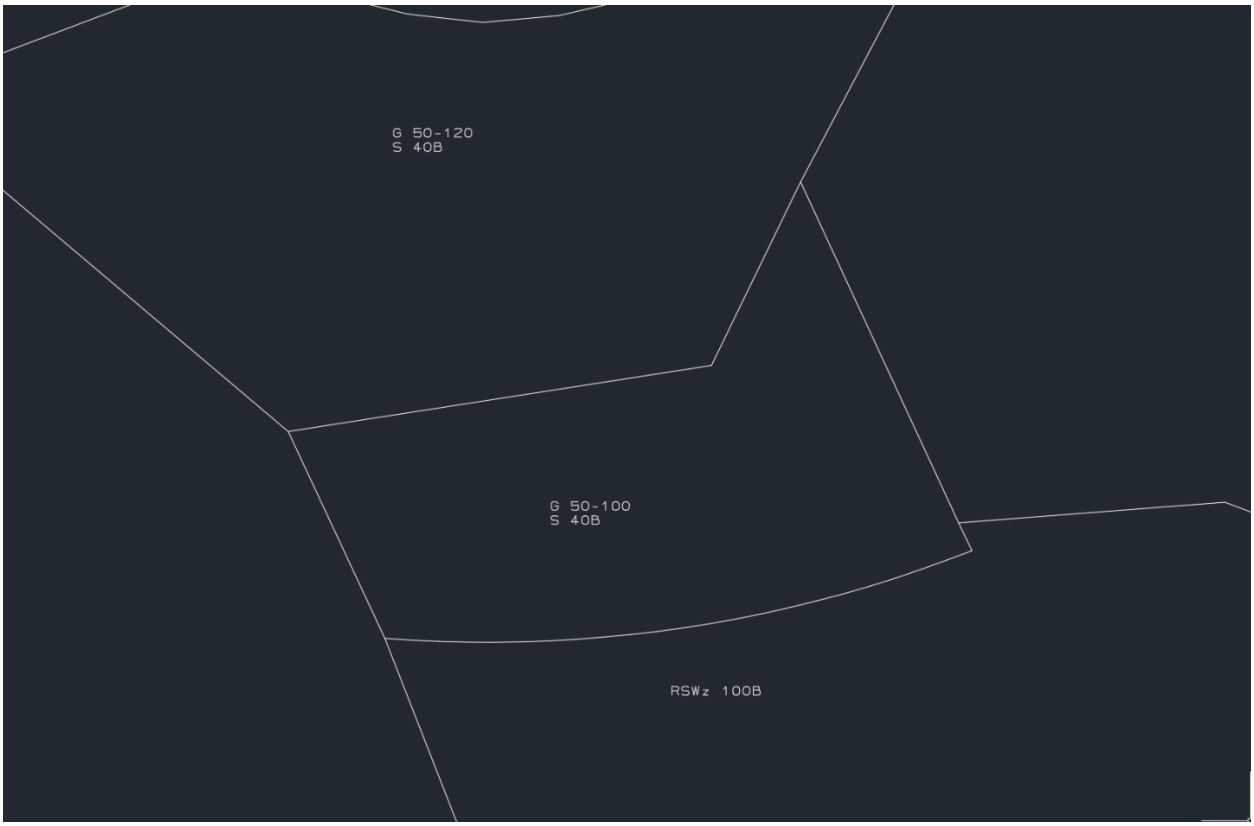

Figure 2 - RSW TRACON and TPA TRACON Boundary

For VATSIM simulation purposes only. No affiliation with FAA.

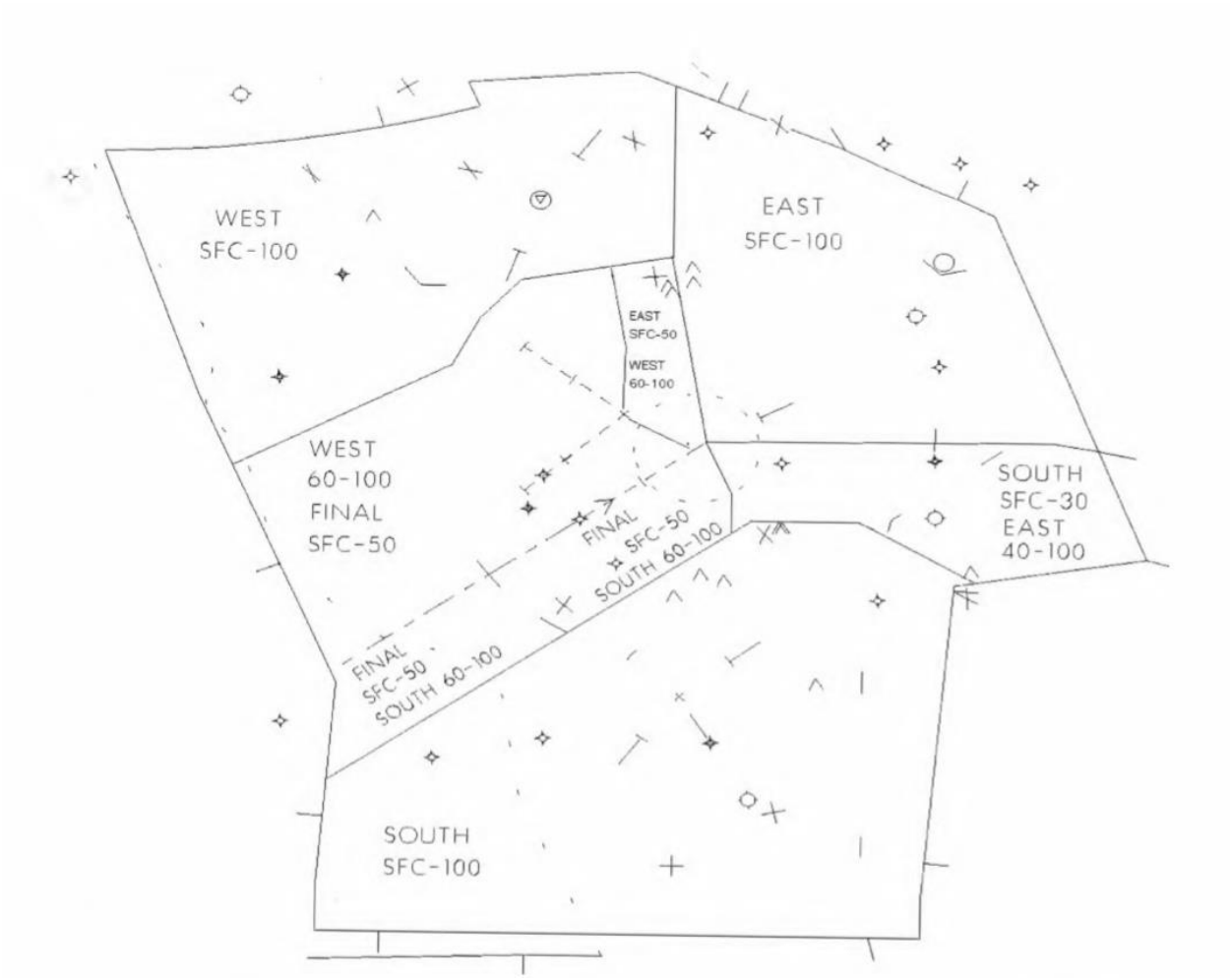

Figure 3 - RSW TRACON Sectors East Ops

For VATSIM simulation purposes only. No affiliation with FAA.

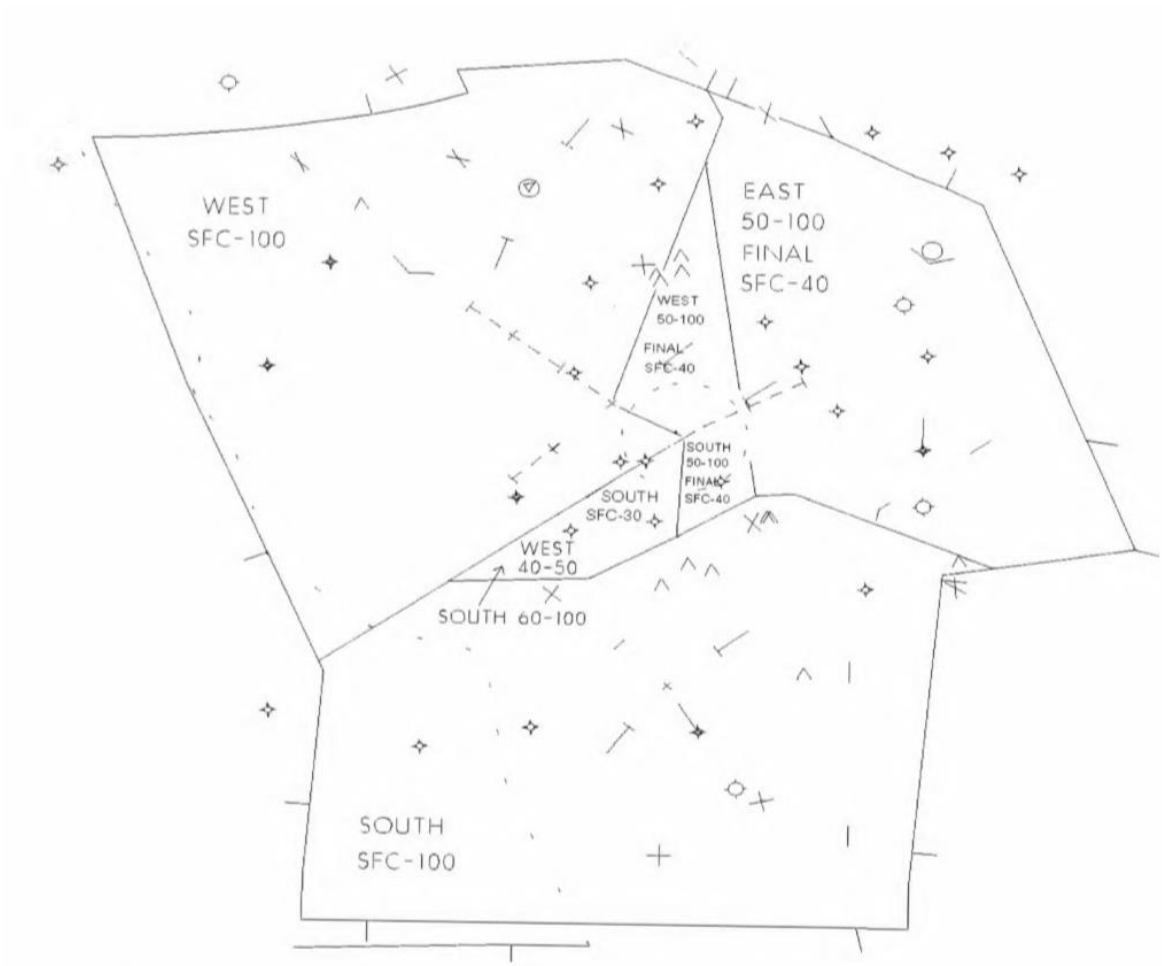

Figure 4 - RSW TRACON Sectors West Ops

For VATSIM simulation purposes only. No affiliation with FAA.